Item No.
3

CITY OF WESTMINSTER			
PLANNING APPLICATIONS COMMITTEE	**Date** 17 March 2015	**Classification** For General Release	
Report of Operational Director Development Planning		**Wards involved** St James's	
Subject of Report	**London School Of Economics & Political Science, Houghton Street, London, WC2A 2AE**		
Proposal	Demolition of existing buildings known as Clare Market, The Anchorage, the East Building, St Clements (partial) and Tower One (partial) and redevelopment to provide replacement interconnected academic facilities for Class D1 and ancillary uses, comprising a two storey basement, a part six storey / part 13 storey building and a seven storey core extension to the St Clements building, and associated cycle parking and other works. All arranged around a new public square.		
Agent	Turley		
On behalf of	London School of Economics & Political Science		
Registered Number	14/12261/FULL	**TP / PP No**	TP/1956
Date of Application	12.12.2014	**Date amended/ completed**	12.12.2014
Category of Application	Major		
Historic Building Grade	Unlisted		
Conservation Area	Strand		
Development Plan Context - **London Plan July 2011** - **Westminster's City Plan: Strategic Policies 2013** - **Unitary Development Plan (UDP) January 2007**	Within London Plan Central Activities Zone Within Core Central Activities Zone		
Stress Area	Outside Stress Area		
Current Licensing Position	Not Applicable		

1. RECOMMENDATION

1. Subject to the views of the Mayor of London, grant conditional permission subject to a S106 legal agreement to secure:

a) Compliance with the City Council's Code of Construction Practice, and submission of a CEMP (Construction Environmental Management Plan) to an annual cap of £37,000.
b) Provision of public art in accordance with Condition 5 to a minimum value of £50,000.
c) Costs of Highway and Public Realm works required for the development to occur.
d) Stopping up and dedication of highway and associated costs.
e) Walkways agreement for access to the public square.
f) Means to ensure that demolition and development are carried out in accordance with a programme of works to be approved by the local planning authority.
g) Replanting and replacement tree planting.

Item No.
3

h) The costs of monitoring the S106 agreement.

2. If within six weeks of the resolution to grant conditional permission the S106 legal agreement has not been completed and there is no immediate prospect of the legal agreement being completed, then

a) The Operational Director shall consider whether it would be possible and appropriate to issue permission with additional conditions attached to secure the benefits listed above. If so, the Operational Director is authorised to determine and issue such a decision under Delegated Powers; however, if not:

b) The Operational Director shall consider whether permission should be refused on the grounds that it has not proved possible to complete a S106 legal agreement within an appropriate timescale, and that the proposal is unacceptable in the absence of the benefits which would have been secured; if so, the Operational Director is authorised to determine the application and agree appropriate reasons for refusal under Delegated Powers.

3. That Committee authorises the making of a draft order pursuant to S247 of the Town and Country Planning Act 1990 for the stopping up of parts of the public highway to enable this development to take place.

4. That the City Commissioner for Transportation be authorised to take all necessary procedural steps in conjunction with the making of the order and to make the order as proposed if there are no unresolved objections to the draft order. The applicant will be required to cover all costs of the Council in progressing the stopping up order.

5. That the City Commissioner for Transportation be authorised to adopt areas of land on St Clement's Lane, Clement's Inn Passage and Grange Court as public highway as necessary to facilitate continued free and unobstructed routes through the area.

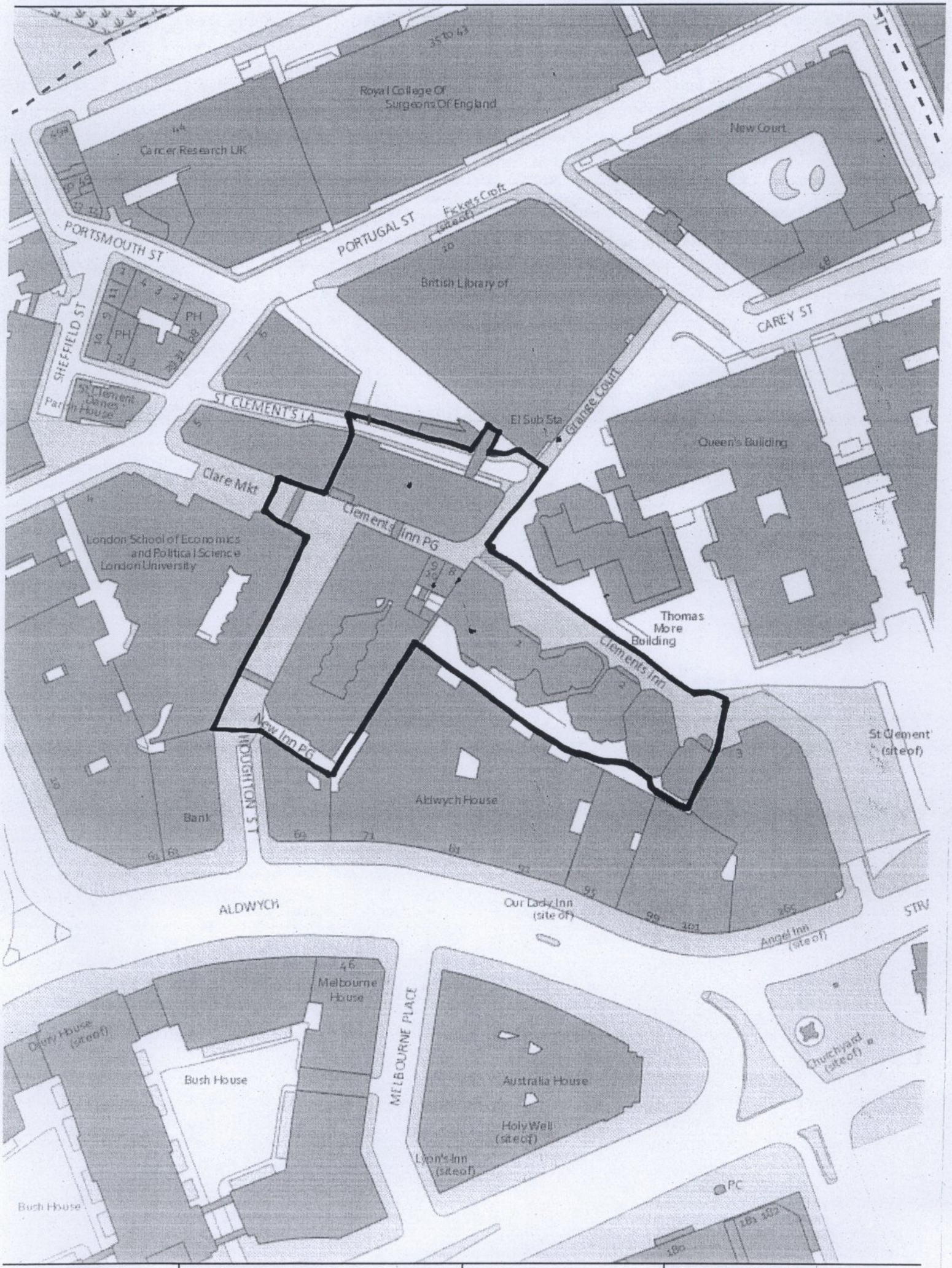

This product includes mapping data licensed from Ordnance Survey with the permission of the Controller of Her Majesty's Stationery Office.

Data Source:

N

0 5 10 20 Metres

LONDON SCHOOL OF ECONOMICS AND POLITICAL SCIENCE,
HOUGHTON STREET, WC2

Item No.
3

2. SUMMARY

The development site is bounded by Houghton Street, New Inn Passage, St Clement's Lane and Grange Court and is currently occupied by a number of buildings known as St Clement's East, Clare Market, the East building and the Anchorage at the heart of the LSE campus. None of the buildings are listed but the site lies within the Strand Conservation Area and Core CAZ.

The proposed scheme is for demolition/ part demolition and redevelopment of the site for a new School building providing new educational facilities and a new public square. The proposed structure comprises a 13 storey tower (The Tower Building), adjoining a part two storey/part six storey block (Houghton Street block), linked to a two storey basement spanning underneath the majority of the site, which in turn links to a seven storey glazed stair core to the existing St Clement's building. The proposed new core to the St Clements building will provide a main entrance and lobby for the remainder of that building and will also link into the basement spanning the site. The new public space, the LSE square has been designed to unify and animate the LSE quarter.

The key issues relate to:

- Loss of existing buildings in the conservation area.
- Design of the replacement building and impact upon the conservation area and more distant views.
- Impact of the proposed development upon amenity of adjoining buildings.

Whilst it is regrettable that some buildings of heritage value will be demolished, it is considered that the overall public benefits of the architectural quality of the new buildings, the creation of a significant new public square and the benefits to the student community and the future development and success of one of the country's foremost academic institutions outweigh the harm caused by the loss of these buildings.

The proposals are considered to comply with the relevant policies in the London Plan, Westminster's City Plan: Strategic Policies and the Unitary Development Plan and approval is recommended subject to the views of the Mayor.

3. CONSULTATIONS

ENGLISH HERITAGE
No objection in principle to this approach. Authorisation to determine application.

ENGLISH HERITAGE (ARCHAEOLOGY)
Following the submission of additional information, the scheme is now acceptable subject to pre-commencement safeguarding conditions.

ENVIRONMENT AGENCY
No comments as proposal is low risk in respect of the environmental constraints that fall within their remit.

GLA
Application is generally supported in strategic planning terms and is of very high quality design. Further information/clarification sought regarding ground floor treatment at the northern end, access details, energy details, maintaining Clements Inn Passage, and conditions requested by TFL.

WESTMINSTER SOCIETY
The Society regards this project as something worthy of our full support as the proposals represent a significant improvement over what currently exists and would markedly improve both access arrangements and facilities more generally for the LSE and the new public square would be a great addition.

HIGHWAYS PLANNING MANAGER
No objections subject to conditions.

CLEANSING MANAGER
No objection subject to conditions.

ENVIRONMENTAL HEALTH
No objections on environmental noise or nuisance grounds subject to conditions.

ARBORICULTURAL MANAGER
No objections subject to conditions.

GO GREEN MANAGER
No objections subject to conditions.

BUILDING CONTROL
Given the size and scale of the scheme, they would expect a Chartered Structural Engineer of significant competence to be involved in the structural provisions for this project and would not therefore be looking for further structural information at this stage.

ADJOINING OWNERS/OCCUPIERS AND OTHER REPRESENTATIONS
No. Consulted: 141; Total No. of Replies: 0.

4. BACKGROUND INFORMATION

4.1 The Application Site

The LSE campus occupies a range of buildings from Lincoln's Inn Fields in the north through to the Aldwych in the south, and Kingsway to the west. The application site is bounded by Houghton Street, New Inn Passage, St Clement's Lane and Grange Court and is currently occupied by a number of partly vacant buildings situated at the heart of the LSE campus. The buildings are known as St Clements (East), Clare Market, the East building and the Anchorage.

St Clement's East consists of a two storey podium and a five storey building and an adjoining eight storey tower, accommodating teaching and ancillary office space. Clare Market was constructed in the late 1960s and comprises a two storey podium block with a seven storey tower accommodating largely teaching and ancillary office space. A high level covered bridge links Clare Market to the St Clement's Tower. Adjacent to Clare Market is the East building constructed in 1931 and arranged over five to eight storeys. The four storey Anchorage building in Clement's Inn Passage was constructed in the early/mid 19th century and comprises ancillary office accommodation and two ancillary residential apartments which are used for visiting speakers and academics.

The distinguishing character of the site is its intrinsic university campus atmosphere in the midst of a network of Central London streets.

The buildings are unlisted and located within the Strand Conservation Area and the Core Central Activities Zone (Core CAZ) but outside of the West End Stress Area.

4.2 Relevant History

On 26 April 2011, planning permission and conservation area consent was granted for the demolition of St Philips Building, Sheffield Street WC2. Erection of higher education buildings (Class D1) on behalf of L.S.E. accommodating a new student's centre comprising seven storeys, two basement levels and associated hard landscaping.

On 22 December 2011, planning permission was granted for a change of use of 32 Lincoln's Inn Fields WC2 from offices to non-residential institution (Class D1) and associated alterations including new entrance pavilions, landscaping of the forecourt and side passage and new plant on roof.

Whilst there are a number of planning permissions for external alterations and modifications to the existing buildings, none of them are directly relevant to the current application.

5. THE PROPOSALS

The proposals involve:

- The demolition of three buildings: East Building, Clare Market and the Anchorage, and the partial demolition of St Clements building. A small amount of demolition is also proposed to the Tower One building to facilitate construction works.
- Redevelopment of the site with a new School building providing new educational facilities and ancillary services including teaching facilities and a student café/restaurant.
- Creation of a new public square at the heart of the development.

The proposed structure comprises a 13 storey tower (The Tower Building), adjoining a part two storey/part six storey block (Houghton Street block), linked to a two storey basement spanning underneath the majority of the site, which in turn links to a seven storey glazed stair core to the existing St Clement's building. The proposed new core to the St Clements building will provide a main entrance and lobby for the remainder of that building and will also link into the basement spanning the site.

The redevelopment provides the opportunity to radically improve the quality and appearance of the estate and the wider area, providing dramatically improved accommodation and facilities for staff, students, alumni and visitors, while also improving the public realm and the connections between buildings. The building is a key element within the LSE's future estates strategy and will follow the very high standards set by the Sterling Prize nominated Saw Swee Hock Student Centre at Sheffield Street.

The new building will provide a mixture of accommodation including teaching facilities, accommodation for academic departments and research institutions, student study spaces and a new catering facility with the publicly accessible areas of the building located on the lower ground and ground floors.

The proposed uses of the floors are as follows:

Floor 13	-	Plant & Green Roof
Floors 3-12	-	Academic Departments with external terraces at Floors 6, 7, 11 and 12.
Floor 2 -	-	Teaching Space and Academic Department & Terrace Gardens.
Floor 1	-	Teaching space & Academic Department
Ground floor	-	Refectory Dining Area & Café & Student Centre.
Basement 1	-	Lecture Theatres, Teaching and Learning Space.
Basement 2	-	Plant.

6. DETAILED CONSIDERATIONS

6.1 Land Use

The London School of Economics and Political Science (LSE) is a specialist university with an international intake. Founded in 1895, the school has an outstanding reputation for academic excellence and has grown to become one of the foremost social science universities in the world.

It is the school's strategy to attract and retain the very best students and staff and the LSE would like to create exemplary facilities for them. This application represents the next stage of the campus improvement programme which will help the school to compete worldwide with the very best academic institutions.

The proposed redevelopment would create 19,766 (GEA)m2 of educational floorspace with a net additional uplift in floorspace of 7109 (GEA)m2. The proposed new building, along with other initiatives at LSE will contribute to the growth of LSE from approximately 10,200 (9,600 full time and 600 part time) students (current level) to approximately 11,000 students in 2019, representing a 7.8% growth during this period. The new building will house approximately up to 1,083 along with 350 staff (academic and catering) giving a total of 1,433 occupants.

Within the London Plan, LSE is shown as being within the Central Activities Zone (CAZ) and within important clusters of specialised CAZ uses including legal, health, academic, state and 'special' uses including the university precinct in Bloomsbury/The Strand where such clusters will be supported under Policy 2.11. Paragraph 4.54 recognises that London's higher and further education sectors are important economic sectors in their own right with a key part to play in developing London's world city offer. Policies 3.18 and 4.10 give strong support for London's higher and further education institutions and their development, recognising their needs for accommodation and the special status of the parts of London where they are located, particularly the Strand university precincts.

The Unitary Development Plan in Chapter 1 para 1.15 also recognises the special character of the Strand citing educational functions (London School of Economics and King's College) at the eastern end of the Strand.

In UDP Policy STRA 1, it is the City Council's aim to foster Westminster's key 'world class' city role including its education establishments and to allow sustainable developments that promote them. Westminster is an internationally renowned centre of academic excellence providing research and consulting services internationally and these elements collectively form a vital part of the overall appeal of London to residents, workers and visitors and are essential to London's continued success.

In-principle support for educational development is provided by the identification of these uses as a use to be protected within the CAZ, and UDP Policy CENT 1 protects and supports uses including Higher Education and other activities that make a significant contribution to the special role of Central London.

Education uses are also protected and supported by Westminster's City Plan Policies S27, S22 and S34 and UDP Policies SOC 1 and SOC 3.

The lower ground floor spans underneath the majority of the site and is arranged around a generous foyer, which provides a flexible space to accommodate areas for teaching, learning, study, dining and informal breakout/socialising. Harvard style lecture theatres and a 180 seat auditorium are accessed via the foyer area. Preparation, cooking, storage and staff welfare areas are also located at the rear of the ground floor beneath the Tower building. Access to

the lower ground floor will be via a wide staircase descending from the ground floor of the Houghton Street entrance, and will also be possible from the new St Clement's Core entrance, which will provide access via the auditorium. The sub-basement is proposed primarily for the location of plant, machinery and storage.

At ground floor level, a large atrium contains the main entrance with access to the lifts and staircases serving the buildings. Most of the floorspace at this level is devoted to catering facilities with a large refectory/ dining area and a café, both with frontages facing onto the Houghton Street elevation and the proposed LSE Square. The larger teaching spaces in the building will be used for public lectures and it is expected that the public will use the café facilities before and after public events.

The scheme will create a new public space, the LSE square which has been designed to unify and animate the LSE quarter. The new public square is formed by the part demolition of the St Clements building and the East building, with this space providing the footprint of the public space. With a realignment of St Clement's Passage and public realm improvements proposed to St Clement's Lane, it is proposed to create a more pedestrian orientated environment.

As well as being open to the public, it is envisaged that the square will be used by students and staff for small informal groupings and will provide external space for the new café and restaurant. The School currently holds student related events in the pedestrianized Houghton Street and Clare Market, and it is expected that the new public square will accommodate these and other events as it will provide a larger and more flexible space.
Such events may include:

- Student information stalls
- Catering pop up vehicles
- Open air lectures/debates/films
- Markets.

For general use it is expected that the building will be open at 06:00 and close at midnight Monday to Friday, and 08:00-22:00 Saturday and Sunday (including Bank Holidays).

The applicants have submitted a draft management plan which includes information about the public square and its use, catering, operational times, security and CCTV. It is recommended that a more detailed operational management plan be conditioned to cover issues including the use of the square and frequency of 'events', and measures to ensure that the use of the public square and the roof terraces does not adversely affect the amenity of adjoining properties.

In land use policy terms, it is considered that the proposal for new accommodation for the L.S.E. is wholly appropriate and in line with policies in the London Plan, Westminster's City Plan and the UDP.

6.2 Townscape and Design

6.2.1 The existing buildings

The site lies within the Strand Conservation Area. A number of buildings are proposed to be demolished to allow the redevelopment to proceed.
The late C20 buildings that are proposed to be demolished are considered to be negative elements in the conservation area and their replacement is welcome.

The mid C19 Anchorage building is an attractive stock brick design and is a rare survival of the small scale townscape that pre-dated the construction of the LSE campus. There is very little internal fabric of any historic significance. It is identified in the Strand Conservation Audit

as making a positive contribution to the conservation area and it is considered that this attribution is correct. The demolition of this building would have to be justified with regard to any public benefits that the overall scheme may deliver. Given the location and small scale of the Anchorage, it is agreed that it would be impossible to retain these buildings and achieve the proposed development in any meaningful form.

The Houghton Street building dates from 1931. Its design, at least at the lower level, is strongly influenced by the Old Building on the opposite side of Houghton Street which was built in the 1920s. The Houghton Street building is identified in the conservation area Audit as a negative feature, though it is considered this may be a drafting mistake and this attribution should probably be restricted to the Clare Market building to which it is attached. Further analysis would indicate that the Houghton Street Building makes at least a neutral and probably a mild positive contribution to the conservation area.

The applicants were asked to explore the possibility of retaining the Houghton Street facade within any overall development of the site. However, the step backs at upper level mean that it is only practicable to consider retaining the lower part of the Portland stone facade and the small element of retained fabric would maintain little integrity and present a very limited contribution to the conservation area. Indeed, it is considered that the contrived and awkward juxtaposition with the new building could be considered to constitute a harmful impact on the conservation area character. As above, the demolition of this building would have to be considered in the context of the overall public benefits that the scheme may deliver.

The only other area to be demolished that is of any interest is the end, masonry, bay of the St Clements building which is being demolished to help create space for the new public square. This building is considered to make a neutral contribution and the partial removal of one end is not considered to have a harmful impact on the conservation area.

6.2.2. The form and height of the proposed development

The plan form of the proposed development maintains the established building line to Houghton Street and opens out into a new central space that is intended to provide a major social hub for the LSE campus. This connects with the existing Library Plaza and provides a significant new outdoor space. The building form is composed of a tall block facing onto the square and a lower block facing onto Houghton Street. There is a linked atrium/foyer space between the two building forms. Both buildings are higher than the buildings that they replace but they generally reflect the height of adjacent existing buildings. The taller building is comparable in height to the buildings to the west while the lower Houghton Street building reflects the scale of nearby buildings on the campus and is lower than those buildings fronting onto the Aldwych.

The applicants have submitted a detailed views analysis showing the impact of the building on more distant views. Three of the viewpoints are identified in the London View Management Framework (LVMF) and require particularly close analysis.

LVMF view 14A.1 is from Blackfriars Bridge looking upstream. The new building would have a very minor impact, the very top of the building just being visible but it sits within the context and height of surrounding roof forms. It is not considered that this impact is harmful to this view.

LVMF view 16A.1 is from the South Bank outside the National Theatre looking north towards Somerset House and buildings on the North Bank. Somerset House is the key landmark in this view. The top of the new building is seen in a gap between the Kings building and development to the east. The new building is no higher than these and is not unduly prominent on the skyline. It does not detract from views of Somerset House. While there is

some impact, it is not considered that the view is harmed, particularly when considering the scale of the approved development immediately to the east at Arundel Great Court.

LVMF view 15B.2 is from Waterloo Bridge directed along the centre of the Thames. Somerset House does not feature in this LVMF viewpoint, but the applicants have submitted a view slanted north-east showing Somerset House in the middle of the view and the application site beyond. The proposed building projects very slightly above the height of the Kings College Strand building. It is not considered that this impact is harmful.

Views have also been assessed from Lincoln's Inn Fields and from New Square. These both show a minor, but not harmful impact, in winter views. In summer, the tree cover would largely conceal these views of the building. Other views of the building from local viewpoints show the building in its surrounding context. While the new building is higher than the existing in certain viewpoints, it is not considered that it appears out of scale with its surrounding context.

6.2.3. The detailed design of the new building

The building design reflects the grain of the adjacent library and Old Building. A 6 metre grid is the defining element of the façade design which reflects the scale and proportion of the library building. To the Houghton Street facade, there is a secondary 3m grid which reflects the strong vertical rhythm of the Old Building on the other side of Houghton Street.

The Houghton Street building has reconstituted stone cladding to the lower floors which reflects the materiality of the previous building on the site and the Old Building opposite. The ground floor is fully glazed between stone piers and allows for the proposed café/restaurant use to open out into the street in fine weather. The stone cladding is to alternate bays with those between further subdivided into three panels of clear glass, translucent glass and anodized aluminium panel, reflecting the internal use behind. At third floor level, a strong horizontal "cornice" reflects the scale of the parapet on the Old Building. Above this, the stone cladding is dispensed with and the rhythm of clear and translucent glass and aluminium panels extends across the facade. At this level, vertical fins for solar shading are introduced, with the fins growing in depth as they ascend the building, responding to the degree of shading required. The fins are of anodized aluminium and are fixed to orange coloured support posts. This support post retains a consistent size though the size of the fins varies. The facade has a strong vertical emphasis and with secondary and tertiary detailing providing significant interest and modelling. The ends of the building are treated as "bookends" with a simply expressed glass facade and exposed steel bracing that provides a distinctive aesthetic to the end elevations.

The tower building is based on the same modular system as the Houghton Street building but with a 6m structural bay subdivided into 1m panels of clear and translucent glass and aluminium panel. Again, vertical fins of varying depth provide solar shading. This provides a rich lattice work across the main façade, which is then interrupted by a series of ascending double height spaces reflecting the departmental stairs behind, where it is intended people will be able to gather and enjoy the views out. The soffit of these spaces is clad in red aluminium panels providing a most distinctive profile to views from the main square. The ends of the building are also treated in a similar manner with exposed steel bracing and simple glazed end walls.

The roofs of the Houghton Street building are intended to be used as landscaped terraces, while the tower building has semi-enclosed terraces at top floor level with solar pv panels on the roof element remaining. The buildings have significant space set aside for communal use and relaxation.

6.2.4. The St Clements Building

In order to create the new square, the end bay of the St Clements Building has to be demolished and this contains the vertical circulation core for the building. There is therefore a need to provide new stair and lift access to the rest of the building that remains. This is in a prominent location being on the new main square and also terminating the view down Houghton Street towards the square. The proposed design is of a richly detailed timber stair with timber balustrades sitting within a simple, clear single glazed box. The adjacent lift shaft will be in translucent glass. It is considered that this will provide a high quality finish to this otherwise blank façade and that the visibility through the glass wall will allow for a degree of interaction between people on the stairs and in the square which will help to animate the whole experience of using the stair core.

There are no objections to the proposal from English Heritage or any other consultee with regard to the loss of existing buildings or to the design of the new building.

In summary, it is considered that the proposed building provides a richly detailed and articulated design that provides a level of detail and interest which is often absent in large academic buildings. The scale and height of the buildings are appropriate to their context. While it is regrettable that some buildings of heritage value will be demolished, it is considered that the overall public benefits of the architectural quality of the new buildings, the creation of a significant new public square and the benefits to the student community and the future development and success of one of the country's foremost academic institutions outweigh the minor harm caused by the loss of these buildings. It is also clear that it would be impossible to retain these buildings and achieve the quality of design and significant public benefits that this scheme delivers.

6.2.5. Public Realm

The proposed scheme allows for the creation of a new public square of approximately 750m2 at the heart of the campus. This requires adjustment to St Clement's Passage, which is realigned, and to the eastern part of St Clement's Lane and Clare Market which are repaved and form part of the central open space. Much of this land is public highway and negotiation is ongoing with WCC Highways over any necessary rearrangement of highway boundaries and management of the Square. The new Square will merge with the existing open space to the front of the library with some adjustment to the change in level to create new seating steps and allow the spaces to be more substantial and integrated. A zone for mature tree planting has been identified at the northern end of the open space. Repaving would be in high quality natural stone, granite setts and paving materials. The central square would have a specific paving pattern and material to define the space. It is intended that this space can be used for a variety of uses including public assembly, street markets, al fresco dining, exhibitions and for outdoor screenings. It is considered that this space will make a most attractive and inviting contribution to the LSE campus as a whole. Elsewhere, the streets and alleys around the site are repaved in natural stone/paving materials. Existing trees that will be lost in Houghton Street will be replaced.

6.2.6. Wind Study

An assessment of the likely wind conditions around the proposed development has been carried out on behalf of the applicants using the Lawson Comfort Criteria to describe the expected on site wind conditions.

The proposed development is sheltered from prevailing south westerly winds by the surrounding neighbouring buildings and the wind microclimate at ground floor level around the proposed development is expected to be suitable for the intended pedestrian use around the

site. Mitigation measures have therefore not been recommended. The two large terraces at 2nd and 6th floors are expected to be suitable for sitting in the summer due to shelter from most wind directions. Terraces on the 7th, 11th and 12th floor levels are higher than the immediate neighbouring buildings, which mean that they are exposed to wind blowing from all directions except where self-shelter is provided. However the inclusion of full height glazing to the east and west sides on these terraces is a beneficial design feature which provides sufficient shelter to achieve comfortable sitting conditions during the summer season. Mitigation measures have again not therefore been recommended.

6.2.7. Archaeology

The proposed site lies within an Archaeological Priority Area for Saxon Lundenwic and Thorney Island. Because of the archaeological significance of this area particularly in relation to the Saxon occupation of the area, a Precommencement condition requiring additional information is recommended.

6.3 Amenity Impact (Daylight/Sunlight)

The proposals will result in a significant increase in height and bulk compared with the existing buildings and will have an impact on neighbouring properties. The properties surrounding the site are mainly educational with offices/ legal chambers to the south east and east of the site and with no residential accommodation directly affected.

The City Council seeks to protect and improve amenities for residents, workers and visitors and the relevant policies are UDP Policy ENV 13 and S29 in Westminster's City Plan.

Proposals will normally be resisted by the City Council if they result in a material loss of daylight/sunlight, particularly to existing dwellings and educational buildings. Although the policies are primarily designed with regard to residential accommodation, the City Council may apply them to other uses such as schools and other activities where loss of daylight/sunlight in particular may prejudice the present use of the premises.

Recommended standards for daylight and sunlight in residential accommodation are set out in the Building Research Establishment (BRE) publication 'Site layout planning for daylight and sunlight' (2011). Whilst daylight and sunlight impacts are generally only assessed against residential dwellings, there are some special circumstances where other non-domestic properties such as hotels, hostels, schools and churches are required for testing, where the BRE guide states the occupants might have a "reasonable expectation of daylight."

With regard to daylight, Vertical Sky Component (VSC) is the most commonly used method for calculating daylight levels and is a measure of the amount of sky visible from the centre point of a window on its outside face. This method does not need to rely on internal calculations, which means it is not necessary to gain access to the affected properties. If the VSC achieves 27% or more, then the BRE advises that the windows will have the potential to provide good levels of daylight. If, however, the light received by an affected window, with the new development in place, is both less than 27% and would be reduced by 20% or more as a result of the proposed development, then the loss would be noticeable.

In terms of sunlight, the BRE guidelines state that windows should be tested if they face within 90 degrees of due south but no sunlight assessments have been undertaken due to the non-residential use of any of the surrounding buildings.

No letters of objection have been received on daylight or sunlight grounds.

The applicants have commissioned a daylight study in accordance with Building Research Establishment (BRE) Report 209 by Anstey Horne which includes a daylight assessment of

surrounding LSE owned university buildings, as well as an assessment of the commercial building known as Aldwych House.

Lionel Robbins –LSE Library Building
Out of the 38 windows tested, 9 (24%) windows will incur losses greater than 20%, ranging from 31% to 35%, but in most cases, these rooms are lit by other windows that satisfy the BRE guidelines.

Tower One, Clements Inn- LSE
This university owned building will be the most impacted building and out of the 165 windows tested 115 (69%) will incur losses greater than 20% with an average reduction of 43%. It is understood however that all of the rooms facing the site, excluding any secondary spaces such as staircases, hallways or W.C's will have at least one window that satisfies the BRE guidelines.

Columbia House -LSE
All the windows tested will comply with BRE guidance and some will incur improvements in VSC as a result of the proposal.

Connaught House - LSE
All the windows tested will comply with BRE guidance.

Old Building-LSE
The VSC results confirm that the windows at the southern end of the building will experience little or no reduction in daylight as a result of the proposal, with a handful of windows also experiencing some marginal improvements.

Out of 75 windows 53 (70%) will incur losses greater than 20% ranging from 22% to 52%.

St Clements Building (West)-LSE
Of the 10 windows tested, 2 (20%) would fall just below the guidelines with losses of 23% to 21% and the rooms affected are understood to be lit by additional windows.

Cowdray House-LSE
Of the 16 windows tested, 8 (50%) will incur losses greater than 20% but as the existing VSC figures are low, any loss appears disproportionately large.

Aldwych-Adjoining office building
Of the 113 windows tested 36 (31%) will incur losses of greater than 20% and these are located at the northern end of Aldwych House close to the site boundary and are not in themselves good neighbour windows. However, 56 (63%) of the windows tested will incur improvements as a result of the development.

In terms of the impact upon other LSE buildings, the assessment has shown that that there will be some losses and some gains of daylight, but the impact is upon LSE's own properties. It could not be argued that the impact would prejudice the current use of the buildings and is considered acceptable in the context of the overall scheme.

With regard to the impact upon the adjoining Aldwych office building, whilst there are clear technical breaches, offices are not afforded the same amount of protection as residential accommodation and it is not considered that the impact is sufficient to justify a refusal on daylighting grounds. Additionally, the report demonstrates significant gains to many windows as a result of the development.

The other building which will be affected by the proposal is the Thomas Moore Building, opposite Tower 1 building to the east of the application site. This is owned by the Royal

Courts of Justice and the windows most directly affected are windows to the north west corner of the tower block which will face directly onto the proposed 13 storey building and appear to be chambers and offices.
Given the fact that the occupiers of the building rely heavily upon artificial light, and are not afforded the same amount of protection as residential accommodation, it is not considered that a refusal on daylighting grounds could be justified.

On the basis of these results, it is not considered that the proposed development will have a significant adverse impact on any existing neighbouring properties, sufficient to justify a refusal on planning grounds, and the proposal is therefore in accordance with UDP Policy ENV 13 and Westminster City Plan policy S 29.

6.4 Plant

The plant is to be located internally at Basement and externally at roof top Level 13. Environmental Health raise no objections in principle subject to conditions relating to the details of the plant and an accompanying acoustic report. The scheme currently shows a low level kitchen duct which is not acceptable to Environmental Health on air quality and odour grounds. An amending condition is recommended to secure a high level duct.

6.5 Transportation/Parking

The LSE is located in a highly accessible area of London and can be easily and safely accessed by a variety of modes of transport. The site has a PTAL rating of 6b equating to a BREEAM accessibility index score over 18 which is the highest achievable. The submitted Travel Plan consequently focuses on public transport and active modes of travel.

Most servicing is proposed to take place from the towers building which is to be welcomed. However, larger vehicles will not be able to access the area and it is proposed to use the newly-formed public square for any servicing by larger vehicles. Refuse vehicles will still have to reverse into the site from the Strand, but they already do this and no objections are raised to this aspect. A servicing management plan is recommended to ensure that the use of the public square for servicing is minimised and that vehicular conflict from the towers building is minimised.

With regard to cycle parking, 186 spaces are proposed which is considered acceptable in policy terms. However the scheme shows that whilst the majority of these spaces (120) will be located internally within the basement/under croft of the Tower one building, others will be placed externally, some on the highway. The principle of cycle spaces on the public highway is not acceptable and a condition is recommended requiring approval of details of the spaces.

The principle of a large public square is supported, although discussions relating to the ownership and maintenance are continuing as the space is owned by the LSE in part and the Council in part. Stopping up orders and dedication orders will be required. A Walkway agreement is also required to control public access to the square.

Subject to conditions and a legal agreement to cover costs of highway and public realm works, stopping up and dedication and a walkways agreement, no objections are raised.

6.6 Economic Considerations

LSE is one of the Russell Group universities which is a group representing the 24 leading UK universities. A study published in March 2014 assessed the economic contribution that capital investment by Russell Group universities between 2012-13 and 2016-17 will make to the UK economy.

The key findings of the report are that:

- over a 25 year period capital investment by Russell Group universities is expected to generate gross value added (GVA) with a current value of £44.3 billion for the UK economy. This includes £8.2 billion of short-term impacts relating to construction and fit-out, £10.1 billion longer-term operational benefits and £26.0 billion of wider catalytic impacts stimulated by the activities undertaken in the new facilities;
- these projects are expected to support more than 98,500 UK jobs. This will include around 37,800 temporary jobs during the five-year construction period, around 45,000 permanent operational jobs and almost 15,700 permanent jobs supported by the wider catalytic impact of the activity undertaken in the new facilities; and
- overall these projects are expected to generate £4.89 GVA for the UK economy for every £1 invested'

The proposals are in accordance with the NPPF, the London Plan, Westminster's City Plan and the UDP and the economic benefits generated are to be greatly welcomed.

6.7 Access

The Centre Buildings Redevelopment has been designed with accessibility as a key consideration from the outset. Level access, with high visibility signage, is provided throughout the development including at the main entrance at the northern end of the building, the Houghton Street entrance opposite the main entrance to the Old Building and the 3rd entrance off the square into the Student Services Centre. From level 01 there are large central lifts connecting to all levels with lift access from the student centre to Level 1. Accessible WC's will be provided at all levels. Generous circulation space is provided at all levels and with the exception of one office at level 06, all cellular offices are wheelchair accessible.

It is the intention that the building will be compliant with Part M of the Building Regulations 2010 and the Disability Discrimination Act (DDA) requirements. Additionally the scheme has been designed to take full account of the Mayor of London's SPG on Accessible London.

6.8 National Planning Policy Framework (NPPF)

Central Government's National Planning Policy Framework (NPPF) came into effect on 27 March 2012. It sets out the Government's planning policies and how they are expected to be applied. The NPPF has replaced almost all of the Government's existing published planning policy statements/guidance as well as the circulars on planning obligations and strategic planning in London. It is a material consideration in determining planning applications.

Under the terms of the NPPF, the City Council can continue to give full weight to relevant policies in the Core Strategy and London Plan until 27 March 2013 even if there is a limited degree of conflict with the framework. For the UDP, due weight should be given to relevant policies according to their degree of consistency with the NPPF (the closer the policies in the plan to the policies in the NPPF, the greater the weight that may be given).

The proposal is considered to be consistent with the key elements of the NPPF which are applicable to these proposals. These include:

- Building a strong, competitive economy
- Ensuring the vitality of town centres
- Promoting sustainable transport
- Requiring good design
- Promoting healthy communities
- Meeting the challenge of climate change, flooding and coastal change
- Conserving and enhancing the Natural Environment

- Conserving and enhancing the Historic Environment.

6.9 London Plan

The development is referable to the Mayor who considers that whilst the application is generally supported in strategic planning terms and is of a very high design quality, that further information/clarification is required in relation to ground floor treatment, access, energy and Clement's Inn Passage and subject to conditions requested by TFL.

6.10 Planning Obligations

On 6 April 2010 the Community Infrastructure Levy (CIL) Regulations came into force which make it unlawful for a planning obligation to be taken into account as a reason for granting planning permission for a development, or any part of a development, whether there is a local CIL in operation or not, if the obligation does not meet all of the following three tests:

(a) necessary to make the development acceptable in planning terms;
(b) directly related to the development;
(c) fairly and reasonably related in scale and kind to the development.

Policy CS32 of the Core Strategy relates to planning obligations. It states that the Council will require mitigation of the directly related impacts of the development; ensure the development complies with policy requirements within the development plan; and if appropriate, seek contributions for supporting infrastructure. Planning obligations and any Community Infrastructure Levy contributions will be sought at a level that ensures that the overall delivery of appropriate development is not compromised.

The City Council's Planning Obligations Supplementary Planning Guidance (SPG) sets out in detail the scope and nature of obligations to which certain types of development will be typically subject but in this case, educational uses do not trigger any requirement for specific benefits.

In this case, the principal 'Heads of Terms' of the legal agreement are proposed to cover the following issues:

a) Compliance with the City Council's Code of Construction Practice, and submission of a CEMP (Construction Environmental Management Plan) to an annual cap of £37,000.
b) Provision of public art in accordance with Condition 5 to a minimum value of £50,000.
c) Costs of Highway and Public Realm works required for the development to occur.
d) Stopping up and dedication of highway and associated costs.
e) Walkways agreement for access to the public square.
f) Means to ensure that demolition and development are carried out in accordance with a programme of works to be approved by the local planning authority.
g) Replanting and replacement tree planting.
h) The costs of monitoring the S106 agreement.

It is considered that the 'Heads of Terms' listed above satisfactorily address City Council policies.

6.11 Environmental Assessment Including Sustainability and Biodiversity Issues

Sustainability

The NPPF supports the delivery of renewable and low carbon energy and associated infrastructure and recognises this as being central to the economic, social and environmental dimensions of sustainable development.

Policy 5.2 of the London Plan refers to minimising carbon dioxide emissions and states that development proposals should make the fullest contribution to minimising carbon dioxide emissions in accordance with following energy hierarchy:

1. Be Lean-Use less energy.
2. Be Clean-Supply energy efficiently.
3. Be Green-Use renewable energy.

Policy 5.2 E of the London Plan states that where specific targets cannot be fully achieved on-site, any shortfall may be provided off-site or through a cash in lieu contribution to secure delivery of carbon dioxide savings elsewhere.

Policy S28 of Westminster's City Plan: Strategic Policies requires developments to incorporate exemplary standards of sustainable and inclusive urban design and architecture. Policy S39 states that major development should be designed to link to and extend existing heat and energy networks in the vicinity, except where the City Council considers that it is not practical or viable to do so. Policy S40 considers renewable energy and states that all major development throughout Westminster should maximise on-site renewable energy generation to achieve at least a 20% reduction in carbon dioxide emissions, and where feasible, towards zero carbon emissions, except where the Council considers it not appropriate or practical due to the local historic environment, air quality and/or site constraints.

The applicant has submitted an energy statement setting out the measures incorporated into the proposed development in the context of sustainable design principles. The proposed energy strategy seeks to focus on minimising demand for energy through good passive design (including rainwater and grey water recycling) and efficient low carbon energy supply (including biofuel CHP and solar Photo voltaics (approximately 95m2)). The design of the basement plan allows space for future upgrades in technology and connections to future decentralised energy networks in line with Policy S39.

The design philosophy for the development is for an 'open' building that responds to its changing context both urban and temporal rather than a sealed 'box'. The result of such an approach is that more than 60% of the total building area is designed as fully naturally ventilated while only 15% is fully mechanically ventilated. The remaining spaces are mixed mode ventilation.

It is the intention to achieve a BREEAM 'Excellent' as a minimum although the project aspires to achieve 'Outstanding' if it is found to be technically and financially achievable.

The current scheme is policy compliant in terms of meeting the Council's 20% renewable energy target set out in Policy S40, with renewables resulting in a 44% carbon saving. This is to be greatly welcomed. Overall, the development is predicted to achieve a 52% saving in Carbon dioxide emissions over part L 2013 baseline through demand reduction (good passive design), energy efficiency and use of biofuel CHP and solar PV and this is welcomed as an exemplar for others to follow, exceeding the targets set out in the London Plan and the associated Mayoral SPG.

Overall the proposals are welcomed in sustainability terms and it is recommended that conditions are imposed to secure the measures proposed.

Biodiversity and Greening

To encourage biodiversity, and in accordance with Westminster's City Plan policy S38 and UDP policy ENV 17, the scheme includes landscaping proposals including a number of raised planters and vertical greening elements at street level as well as accessible roof gardens on levels 02 and 06, non-accessible roofs above the stair core and events pavilion and an extensive green roof combined with photovoltaics on level 13. This will be secured by condition. Additionally, bat and bird boxes are proposed to be located on the St Clement's building.

6.12 Other Issues

Statement of Community Involvement

Following an open international design competition organised by the RIBA, Rogers Stirk Harbour and Partners were appointed in November 2013 and a public exhibition of the proposals was subsequently held between 13-17 October 2014. Whilst attendee numbers were not accurately recorded (as the exhibition was not continually staffed), it is understood that footfall was considerable and the applicants have said that the responses from the consultation indicate that there is strong support for the proposals and that there is a desire to see the buildings redeveloped, within the context of significant improvements to the public realm and street scene around the junction of Clare Market and Houghton Street.

The consultation strategy sought to engage with Local Authority, Statutory consultees and the local community and key stakeholders groups throughout the process and to ensure that feedback from consultees was incorporated into the proposal where possible and practical.

The report has been informed by Government Guidance within the National Planning Policy Framework (NPPF) 2012 on community involvement in planning.

Air Quality

The application site is located within the City of Westminster Air Quality Management Area, designated due to exceedences in the relevant air quality standards for annual mean nitrous oxide concentrations and the 24-hour particulate matter concentrations.

Ove Arup & Partners Limited have been commissioned to undertake an air quality assessment in association with the planning application. The development includes one 400kW biofuel Fleetsolve combined heat and power (CHP) plant which will be supplemented by two 592kW gas fired boilers in the winter months.

The construction effects have been assessed using a qualitative approach and it was concluded that with appropriate mitigation measures there is likely to be a negligible effect from dust generating activities on site. An Air Quality Neutral assessment was carried out as required by the GLA Sustainable Design and Construction SPG. This indicated that emissions associated with transport and the operation of boilers and CHP plant are projected to meet the air quality neutral benchmarks. As such, the operation of the proposed development is expected to have an overall negligible impact on the surrounding area and air quality is considered of minor significance in the planning process. Environmental Health have assessed the report including the use of bio-fuel CHP plant and consider the proposals to be acceptable.

Crime and Design
The scheme will provide a well-lit space with safe seating areas which benefit from the natural surveillance of the surrounding buildings and two busy pedestrian thoroughfares which cross the square linking it to the rest of the LSE campus. The design of the landscaping and the lighting of the square and associated routes will also limit opportunities for crime. This will be further enhanced by the LSE's CCTV network. The scheme has been discussed with the Metropolitan Police's Designing out crime officer.

6.13 Conclusion

The very significant role that LSE and other higher educational institutions plays in the City of Westminster and in London as a whole is recognised and the need for the university to enhance its competitiveness with other top universities is acknowledged.

The proposed Centre Buildings Redevelopment will provide an important addition to the London School of Economics' open street campus in central London providing significantly enhanced accommodation for staff, students and visitors, whilst also improving the public realm and the connections between buildings.

The building is a key element of the LSE's future strategy and will complement the Sterling Prize nominated Saw Swee Hock Student Centre nearby in Sheffield Street.

Whilst the scheme will involve the loss of buildings of interest in the conservation area, it is considered that the public benefits outweigh this loss.

The scheme accords with policies in the London Plan, Westminster's City Plan and the UDP and, subject to the views of the Mayor, is recommended for approval subject to conditions and a S106 legal agreement.

BACKGROUND PAPERS

1. Application form
2. Letter from English Heritage (Listed Buildings) dated 5 January 2015.
3. Email dated 24 December 2014 from Environment Agency.
4. Letter dated 13 January 2015 and e-mail dated 2 March 2015 from English Heritage (Archaeology).
5. Letter from Westminster Society dated 30 December 2014.
6. E-mail from Arboricultural Manager dated 3 March 2015.
7. Emails from Go Green Programme Manager dated 19 December 2014 and 26 February 2015.
8. Memorandum from Cleansing Manager dated 4 February 2015.
9. Letter from Greater London Authority dated 26 February 2015.
10. Email from Highways Planning Manager dated 25 February 2015.
11. Email from Building Control dated 27 February 2015.
12. Email from Environmental Health dated 3 March 2015.

IF YOU HAVE ANY QUERIES ABOUT THIS REPORT OR WISH TO INSPECT ANY OF THE BACKGROUND PAPERS PLEASE CONTACT SUE BROWN ON 020 7641 5033 OR BY E-MAIL – sbrown2@westminster.gov.uk

DRAFT DECISION LETTER

Address: London School Of Economics & Political Science, Houghton Street, London, WC2A 2AE

Proposal: Demolition of existing buildings known as Clare Market, The Anchorage, the East Building, St Clements (partial) and Tower One (partial) and redevelopment to provide replacement interconnected academic facilities for D1 and ancillary uses, comprising a two storey basement, a part six storey / part 13 storey building and a seven storey core extension to the St Clements building and associated cycle parking and other works. All arranged around a new public square.

Plan Nos: RSHP-A-80001-P-00 P1, 80002-P-00 P1, 80008-P-B1 P1, 80009-P-00 P1, 80010-P-MZ P1, 80011-P-01 P1, 80012-P-02 P1, 80013-P-03 P1, 80014-P-04 P1, 80015-P-05 P1, 80016-P-06 P1, 80017-P-07 P1, 80018-P-08 P1, 80019-P-09 P1, 80020-P-RF P1, 80030-S-AA P1, 80031-S-BB P1,80032-S-CC P1, 80033-S-DD P1,80040-E-N P1, 80041-E-S P1,80043-E-W P1,80048-P-B1 P1, 80049-P-00 P1, 80050-P-MZ P1,80051-P-01 P1, 80052-P-02 P1, 80053-P-03 P1, 80054-P-04 P1, 80055-P-05 P1, 80056-P-06 P1, 80057-P-07 P1, 80058-P-08 P1, 80059-P-09 P1,80060-P-RF P1, 80092-P-00 P1, 80098-P-B2 P2, 80099-P-B1 P2,80100-P-00 P2, 80101-P-01 P2, 80102-P-02 P2, 80103-P-03 P2, 80104-P-04 P2, 80105-P-05 P2, 80106-P-06 P2, 80107-P-07 P2, 80108-P-08 P2, 80109-P-09 P2, 80110-P-10 P2, 80111-P-11 P2, 80112-P-12 P2, 80113-P-13 P2, 80300-S-AA P2, 80301-S-BB P2, 80302-S-CC P2, 80303-S-DD P2, 80304-S-EE P2, 80400-E-N P2, 80401-E-S P2, 80402-E-E P2, 80403-E-W P2, 80404-E-N P1, 80405-E-W P1, 80570-BC-D-X P2, 80500-D P1, 80501-D P1, 80502-D P1, 80503-D P1, 80550-BT-D-N P1, 80551-BT-D-W P1, 80552-BT-D-N P1, 80553-BT-D-W P1, 80554-BT-D-S P1, 80555-BT-D-E P1, 80560-BH-D-N P1, 80561-BH-D-W P1, 80562-BH-D-W P1, 80563-BH-D-S P1,
Design and Access Statement dated 19 02 2015, Heritage, Townscape and Visual Impact Assessment dated Dec.2014, Acoustic Report dated 12 12 2014, Sustainability Statement dated Dec.2014, Energy Statement Dated 12 12 2014, Transport Assessment dated 12 12 2014, Wind Study dated 12 12 2014, Tree Survey, Arboricultural Impact assessment dated 11 12 2014, Ecology and Biodiversity Statement dated 12 12 2014, Planning Statement dated Dec.2014, Air Quality Assessment 04 12 2014, Archaeological assessment September 2014, Crime Prevention Statement dated Dec. 2014, Draft Management Plan dated Dec.2014, Statement of Community Involvement dated Dec. 2014, Construction Management Plan December 2014 (For information only), Ventilation and Extraction Statement dated 19 02 2015, Daylight and Sunlight Report dated Dec. 2014 and letter from Anstey Horne dated 29th January 2015. Email dated
23rd February 2015.

Case Officer: Sue Brown **Direct Tel. No.** 020 7641 5033

Recommended Condition(s) and Reason(s)

1 The development hereby permitted shall be carried out in accordance with the drawings and other documents listed on this decision letter, and any drawings approved

subsequently by the City Council as local planning authority pursuant to any conditions on this decision letter.

Reason:
For the avoidance of doubt and in the interests of proper planning.

2 You must carry out any building work which can be heard at the boundary of the site only:

* between 08.00 and 18.00 Monday to Friday;
* between 08.00 and 13.00 on Saturday; and
* not at all on Sundays, bank holidays and public holidays.

Noisy work must not take place outside these hours unless otherwise agreed through a Control of Pollution Act 1974 section 61 prior consent by Environmental Sciences in special circumstances (for example, to meet police traffic restrictions, in an emergency or in the interests of public safety). (C11AA)

Reason:
To protect the environment of neighbouring residents. This is as set out in S29 and S32 of Westminster's City Plan: Strategic Policies adopted November 2013 and ENV 6 of our Unitary Development Plan that we adopted in January 2007. (R11AC)

3 You must apply to us for approval of samples of the facing materials you will use, including glazing and paving, and elevations, floor plans and roof plans annotated to show where the materials are to be located. You must not start work on these parts of the development until we have approved what you have sent us. You must then carry out the works according to these details.

Reason:
To make sure that the appearance of the building is suitable and that it contributes to the character and appearance of this part of the Strand Conservation Area. This is as set out in S25 and S28 of Westminster's City Plan: Strategic Policies adopted November 2013 and DES 1 and DES 5 or DES 6 or both and paras 10.108 to 10.128 of our Unitary Development Plan that we adopted in January 2007. (R26BE)

4 You must apply to us for approval of detailed plans of the following parts of the development:
i) new windows at a scale of 1:10
ii) new external doors at a scale of 1:10
iii) the proposed new paved areas and square, including details of lighting and soft landscaping and trees
You must not start work on these parts of the development until we have approved what you have sent us. You must then carry out the work according to these details.

Reason:
To make sure that the appearance of the building is suitable and that it contributes to the character and appearance of this part of the Strand Conservation Area. This is as set out in S25 and S28 of Westminster's City Plan: Strategic Policies adopted November 2013 and DES 1 and DES 5 or DES 6 or both and paras 10.108 to 10.128 of our Unitary Development Plan that we adopted in January 2007. (R26BE)

5 You must apply to us for approval of a scheme of public art as described in your Design and Access Statement.. You must not start work on the public art until we have approved what you have sent us. The public art must be installed in accordance with the approved details within two years of the occupation of the building. You must maintain the approved public art and keep it on this site. You must not move or remove it.

Reason:
To make sure the art is provided for the public and to make sure that the appearance of the building is suitable. This is as set out in DES 7 (A) of our Unitary Development Plan that we adopted in January 2007. (R37AB)

6 Prior to the occupation of any parts of the development, you shall submit and have approved in writing by the local planning authority, a detailed Servicing Management Plan and you must then carry out the measures included in your Plan at all times.

The purpose of the Plan is to maximise and manage the servicing from the towers building to avoid servicing vehicles coming into conflict with each other and with refuse vehicles, and to minimise and control vehicular access to the public square.

Reason:
To maximise the amount of servicing from the towers building and to reduce the amount of vehicular conflict , and to minimise the amount of servicing from the public square as set out in S42 of Westminster's City Plan: Strategic Policies adopted November 2013 and TRANS 20 of our Unitary Development Plan that we adopted in January 2007,

7 You must apply to us for approval of detailed drawings of the following part of the development:
i) Cycle parking for 180 spaces.
You must not start work on this part of the development until we have approved what you have sent us. Thereafter the cycle spaces must be retained and the space used for no other purpose without our prior written consent,

Reason:
To provide cycle parking spaces for people using the development as set out in TRANS 10 of our Unitary Development Plan that we adopted in January 2007.

8 You must hang all doors or gates so that they do not open over or across the road or pavement. (C24AA)

Reason:
In the interests of public safety and to avoid blocking the road as set out in S41 of Westminster's City Plan: Strategic Policies adopted November 2013 and TRANS 2 and TRANS 3 of our Unitary Development Plan that we adopted in January 2007. (R24AC)

9 Pre Commencement Condition
A) No development including demolition shall take place until the applicant (or their heirs and successors in title) has secured the implementation of a programme of archaeological investigation in accordance with a written scheme which has been submitted by the applicant and approved by the local planning authority in writing and a report on that evaluation has been submitted to the local planning authority.
B) If heritage assets of archaeological interest are identified by the investigation under

Part A, then before development commences the applicant (or their heirs and successors in title) shall secure the implementation of a programme of further archaeological investigation in accordance with a Written Scheme of Investigation which has been submitted by the applicant and approved by the local planning authority in writing.
C) No development or demolition shall take place other that in accordance with the Written Scheme of Investigation approved under Part (B).
D) The development shall not be occupied until the site investigation and post investigation assessment has been completed in accordance with the programme set out in the Written Scheme of Investigation approved under Part (B), and the provision for analysis, publication and dissemination of the results and archive deposition has been secured.

Reason:
To protect the archaeological heritage of the City of Westminster as set out in S25 of Westminster's City Plan: Strategic Policies adopted November 2013 and DES 11 of our Unitary Development Plan that we adopted in January 2007. (R32BC)

10 Pre Commencement Condition
No development shall take place within the proposed development site until the applicant, or their agents or their successors in title, has produced a detailed scheme showing the complete scope and arrangement of the foundation design and ground works, which have been submitted to and approved by the local planning authority.

Reason:
To protect the archaeological heritage of the City of Westminster as set out in S25 of Westminster's City Plan: Strategic Policies adopted November 2013 and DES 11 of our Unitary Development Plan that we adopted in January 2007. (R32BC)

11 The potential connection to any future district heating network referred to in your email dated 23rd February 2015 and as shown on your drawing number RSHP-A-80099-P-B1 P2 shall be safeguarded for the life of the development.

Reason:
To ensure that the application is compliant with the requirements of Policy S39 of Westminster's City Plan to enable future connection to a heat and energy network

12 Details of the biodiversity living roof and management plan, shall be submitted to and approved in writing by the Local Planning Authority prior to occupation of the building. The biodiversity living roof shall include:

- a depth of a range between 100 to 150mm of substrate;
- details on the diversity of substrate depth across the roof to provide contours of substrate. This could include substrate mounded in areas with the greatest structural support to provide a variation in habitat;
- details on the diversity in substrate type and sizes;
- details on bare areas of substrate will allow self colonisation of local windblown seeds and the opportunity for solitary bees to nest;
- details on the range of native species of wildflowers and herbs planted to benefit native wildlife (it is recommended that this be seeded and plug planted). A living roof should not reply on one species of plant life, and species such as Sedum (which are not native) should not be relied on;
- locations of log piles/flat stones provided as insect breeding and refuge areas;
- details of the management regime to be employed on the roof.

The biodiversity (green/brown) roof shall not be used as an amenity or sitting out space of any kind whatsoever and shall only be used in the case of essential maintenance or repair, or escape in case of emergency.

The biodiversity roof(s) shall be carried out strictly in accordance with the details so approved and shall be maintained as such thereafter.

Reason:
- To ensure the development provides the maximum possible provision towards creation of habitats and valuable areas for biodiversity in accordance with policies: 7.19; 5.3; 5.9 and 5.11 of the London Plan 2011 and policy S38 of Westminster's City Plan: Strategic Policies (November 2013)

13 The development shall achieve BREEAM New Construction (2011 ed.) with an "Excellent" standard achieved. (or any such national measure of sustainability for refurbishment that replaces that scheme of the same standard).

A post construction certificate confirming this BREEAM standard has been achieved must be issued by the Building Research Establishment, and submitted for approval by the Local Planning Authority within 9 months of completion on site. In the event that the development fails to achieve the agreed rating, a full schedule and costing of remedial works required to achieve this rating shall be submitted to and approved by the City Council within 2 months of the submission to the City Council of the Post Construction Review. Thereafter the schedule of remedial works must be implemented on site within 3 months of our approval of the schedule or the full costs and management fees given to the Council for offsite remedial actions.

Reason:
To comply with policy S 28 and S25 of Westminster's City Plan: Strategic Policies (November 2013), which expects that development within Westminster addresses the wider environmental impacts of the development and to also support Policy 5.3, 5.4 and 5.11 of the London Plan (2011).

14 You must provide the following environmental sustainability features (environmentally friendly features) before you start to use any part of the development, as set out in your application.

Photo-voltaic panels
Rainwater harvesting system
Biofuel CHP system

You must not remove any of these features. (C44AA)

Reason:
To make sure that the development provides the environmental sustainability features included in your application as set out in S28 or S40, or both, of Westminster's City Plan: Strategic Policies adopted November 2013. (R44AC)

15 You must provide the following bio-diversity features before you start to use any part of the development, as set out in your application.

Bat boxes
Bird boxes
Green roofs above the stair core and events pavilion and at level 13
Raised planters, and accessible roof gardens at levels 02 and 06 and vertical greening to level 02

You must not remove any of these features. (C43FA)

Reason:
To increase the biodiversity of the environment, as set out in S38 of Westminster's City Plan: Strategic Policies adopted November 2013 and ENV 17 of our Unitary Development Plan that we adopted in January 2007. (R43FB)

16 Notwithstanding what is shown on the approved plans, you must apply to us for approval of detailed drawings showing the following alteration(s) to the scheme :
Replacement of low level kitchen duct.
You must not start on these parts of the work until we have approved what you have sent us. You must then carry out the work according to the approved drawings. (C26UB)

Reason:
Insufficient information to demonstrate the satisfactory dispersal of cooking fumes to the detriment of the local environment.

17 You must apply to us for approval of details, prior to occupation, of an operational management plan to cover the roof terraces and the public square:
The plan should include proposed hours of operation, proposed capacities and management and mitigation strategies for noise from music, entertainment and patrons, dispersal, lighting and odours, management and maintenance of spaces, frequency of 'events' in the public square and measures to ensure that the amenity of neighbouring occupiers is protected,

Reason:
To protect the environment of people in neighbouring properties as set out in S24, S29 and S32 of Westminster's City Plan: Strategic Policies adopted November 2013 and ENV 6, ENV 7 of our Unitary Development Plan that we adopted in January 2007. (R12AC)

18 (1) Where noise emitted from the proposed plant and machinery will not contain tones or will not be intermittent, the 'A' weighted sound pressure level from the plant and machinery (including non-emergency auxiliary plant and generators) hereby permitted, when operating at its noisiest, shall not at any time exceed a value of 10 dB below the minimum external background noise, at a point 1 metre outside any window of any residential and other noise sensitive property, unless and until a fixed maximum noise level is approved by the City Council. The background level should be expressed in terms of the lowest LA90, 15 mins during the proposed hours of operation. The plant-specific noise level should be expressed as LAeqTm, and shall be representative of the plant operating at its maximum.

(2) Where noise emitted from the proposed plant and machinery will contain tones or will be intermittent, the 'A' weighted sound pressure level from the plant and machinery (including non-emergency auxiliary plant and generators) hereby permitted, when operating at its noisiest, shall not at any time exceed a value of 15 dB below the minimum external background noise, at a point 1 metre outside any window of any residential and other noise sensitive property, unless and until a fixed maximum noise level is approved by

the City Council. The background level should be expressed in terms of the lowest LA90, 15 mins during the proposed hours of operation. The plant-specific noise level should be expressed as LAeqTm, and shall be representative of the plant operating at its maximum.

(3) Following installation of the plant and equipment, you may apply in writing to the City Council for a fixed maximum noise level to be approved. This is to be done by submitting a further noise report confirming previous details and subsequent measurement data of the installed plant, including a proposed fixed noise level for approval by the City Council. Your submission of a noise report must include:
(a) A schedule of all plant and equipment that formed part of this application;
(b) Locations of the plant and machinery and associated: ducting; attenuation and damping equipment;
(c) Manufacturer specifications of sound emissions in octave or third octave detail;
(d) The location of most affected noise sensitive receptor location and the most affected window of it;
(e) Distances between plant & equipment and receptor location/s and any mitigating features that may attenuate the sound level received at the most affected receptor location;
(f) Measurements of existing LA90, 15 mins levels recorded one metre outside and in front of the window referred to in (d) above (or a suitable representative position), at times when background noise is at its lowest during hours when the plant and equipment will operate. This acoustic survey to be conducted in conformity to BS 7445 in respect of measurement methodology and procedures;
(g) The lowest existing L A90, 15 mins measurement recorded under (f) above;
(h) Measurement evidence and any calculations demonstrating that plant and equipment complies with the planning condition;
(i) The proposed maximum noise level to be emitted by the plant and equipment.

Reason:
Because existing external ambient noise levels exceed WHO Guideline Levels, and as set out in ENV 6 (1), (6) and (8) and ENV 7 (A)(1) of our Unitary Development Plan that we adopted in January 2007, so that the noise environment of people in noise sensitive properties is protected, including the intrusiveness of tonal and impulsive sounds; and as set out in S32 of Westminster's City Plan: Strategic Policies adopted November 2013, by contributing to reducing excessive ambient noise levels. Part (3) is included so that applicants may ask subsequently for a fixed maximum noise level to be approved in case ambient noise levels reduce at any time after implementation of the planning permission.

19 No vibration shall be transmitted to adjoining or other premises and structures through the building structure and fabric of this development as to cause a vibration dose value of greater than 0.4m/s (1.75) 16 hour day-time nor 0.26 m/s (1.75) 8 hour night-time as defined by BS 6472 (2008) in any part of a residential and other noise sensitive property.

Reason:
As set out in ENV6 (2) and (6) of our Unitary Development Plan that we adopted in January 2007, to ensure that the development is designed to prevent structural transmission of noise or vibration.

20 You must apply to us for approval of details of a supplementary acoustic report demonstrating that the plant will comply with the Council's noise criteria as set out in Condition 18 of this permission. You must not start work on this part of the development until we have approved what you have sent us.

Reason:
Because existing external ambient noise levels exceed WHO Guideline Levels, and as set out in ENV 6 (1), (6) and (8) and ENV 7 (A)(1) of our Unitary Development Plan that we adopted in January 2007, so that the noise environment of people in noise sensitive properties is protected, including the intrusiveness of tonal and impulsive sounds; and as set out in S32 of Westminster's City Plan: Strategic Policies adopted November 2013, by contributing to reducing excessive ambient noise levels.

21 You must apply to us for approval of detailed drawings of a hard and soft landscaping scheme which includes the number, size, species and position of trees and shrubs. You must not start work on the relevant part of the development until we have approved what you have sent us. You must then carry out the landscaping and planting within one planting season of completing the development (or within any other time limit we agree to in writing).

If you remove any trees or find that they are dying, severely damaged or diseased within three years of planting them, you must replace them with trees of a similar size and species. (C30CB)

Reason:
To improve the appearance of the development, to make sure that it contributes to the character and appearance of this part of the Strand Conservation Area, and to improve its contribution to biodiversity and the local environment. This is as set out in S25, S28 and S38 of Westminster's City Plan: Strategic Policies adopted November 2013 and ENV 16, ENV 17, DES 1 (A) and paras 10.108 to 10.128 of our Unitary Development Plan that we adopted in January 2007. (R30CD)

22 **Pre Commencement Condition**. You must apply to us for approval of a method statement explaining the measures you will take to protect the trees on and close to the site. You must not start any demolition, site clearance or building work, and you must not take any equipment, machinery or materials for the development onto the site, until we have approved what you have sent us. You must then carry out the work according to the approved details.

Reason:
To protect the trees and the character and appearance of this part of the Strand Conservation Area. This is as set out in S25, S28 and S38 of Westminster's City Plan: Strategic Policies adopted November 2013 and ENV 16, ENV 17, DES 1 (A) and paras 10.108 to 10.128 of our Unitary Development Plan that we adopted in January 2007. (R31DC)

23 You must apply to us for approval of details of the location and number of bird and bat boxes. You must carry out this work according to the approved details before you start to use the building.

Reason:
To protect and increase the biodiversity of the environment, as set out in CS38 of Westminster's City Plan: Strategic Policies adopted November 2013 and ENV 17 of our Unitary Development Plan that we adopted in January 2007. (R43CB)

24 Pre-Commencement Condition

You shall submit and have approved in writing by the local planning authority, a Construction Logistics Plan before any works (including demolition) commence on site. You must carry out the measures included in your plan throughout the demolition and construction period.

Reason:
To manage and minimise the impact on the transport network and make suitable and safe provision for pedestrians and cyclists.

25 Before you begin to use the new university buildings, you must apply to us for approval of a Travel Plan. The Travel Plan must include details of:
(a) A comprehensive survey of all users of the university;
(b) Details of local resident and business involvement in the adoption and implementation of the Travel Plan;
(c) Targets set in the Plan to reduce car journeys to the university;
(d) Details of how the Travel Plan will be regularly monitored and amended, if necessary, if targets identified in the Plan are not being met over a period of 5 years from the date the new university buildings are occupied.

At the end of the first and third years of the life of the Travel Plan, you must apply to us for approval of reports monitoring the effectiveness of the Travel Plan and setting out any changes you propose to make to the Plan to overcome any identified problems.

Reason:
In the interests of public safety, to avoid blocking the surrounding streets and to protect the environment of people in neighbouring properties as set out in S41 of Westminster's City Plan: Strategic Policies adopted November 2013 and TRANS 2, TRANS 3 and TRANS 15 of our Unitary Development Plan that we adopted in January 2007. (R45AB)

Informative(s):

1 In dealing with this application the City Council has implemented the requirement in the National Planning Policy Framework to work with the applicant in a positive and proactive way. We have made available detailed advice in the form of our statutory policies in Westminster's City Plan: Strategic Policies adopted November 2013, Unitary Development Plan, Supplementary Planning documents, planning briefs and other informal written guidance, as well as offering a full pre application advice service, in order to ensure that applicant has been given every opportunity to submit an application which is likely to be considered favourably. In addition, where appropriate, further guidance was offered to the applicant at the validation stage.

2 You are advised that the cycle parking should not be on the public highway and should be covered and secure.

3 Please make sure that the street number and building name (if applicable) are clearly displayed on the building. This is a condition of the London Building Acts (Amendments) Act 1939, and there are regulations that specify the exact requirements. If you would like more information, you can contact Ray Gangadeen on 020 7641 7064. (I54AA)

4 Please contact our Cleansing section on 020 7641 7962 about your arrangements for storing and collecting waste. (I08AA)

5 You need to speak to our Highways section about any work which will affect public roads. This includes new pavement crossovers, removal of redundant crossovers, changes in threshold levels, changes to on-street parking arrangements, and work which will affect pavement vaults. You will have to pay all administration, design, supervision and other costs of the work. We wil carry out any work which affects the highway. When considering the desired timing of highway works in relation to your own development programme please bear in mind that, under the Traffic Management Act 2004, all works on the highway require a permit, and (depending on th length of the highway works) up to three months advance notice may need to be given. For more advice, please phone 020 7641 2642. However, please note that if any part of your proposals would require the removal or relocation of an on-street parking bay, this is unlikely to be approved by the City Council (as highway authority). (I09AC)

6 In relation to condition 9, Significant archaeological deposits are anticipated to survive on this site and pre-commencement evaluative works will need to inform the archaeological mitigation strategy here. Written schemes of investigation will need to be prepared and implemented by a suitably qualified archaeological practice in accordance with English Heritage Greater London Archaeology guidelines. They must be approved by the planning authority before any on-site development related activity occurs.

7 In relation to condition 10,the development of this site is likely to damage heritage assets of archaeological interest. The applicant should therefore submit detailed foundation designs for approval.

8 For the avoidance of doubt, this permission does not grant permission for a low level kitchen duct.

9 When carrying out building work you must do all you can to reduce noise emission and take suitable steps to prevent nuisance from dust and smoke. Please speak to our Environmental Health Service to make sure that you meet all requirements before you draw up the contracts for demolition and building work.

Your main contractor should also speak to our Environmental Health Service before starting work. They can do this formally by applying to the following address for consent to work on construction sites under Section 61 of the Control of Pollution Act 1974.

24 Hour Noise Team
Environmental Health Service
Westminster City Hall
64 Victoria Street
London
SW1E 6QP

Phone: 020 7641 2000

Our Environmental Health Service may change the hours of working we have set out in this permission if your work is particularly noisy. Deliveries to and from the site should not take place outside the permitted hours unless you have our written approval. (I50AA)

10 Under the Construction (Design and Management) Regulations 2007, clients, the CDM Coordinator, designers and contractors must plan, co-ordinate and manage health and safety throughout all stages of a building project. By law, designers must consider the following:

* Hazards to safety must be avoided if it is reasonably practicable to do so or the risks of the hazard arising be reduced to a safe level if avoidance is not possible;

* This not only relates to the building project itself but also to all aspects of the use of the completed building: any fixed workplaces (for example offices, shops, factories, schools etc), which are to be constructed must comply, in respect of their design and the materials used, with any requirements of the Workplace (Health, Safety and Welfare) Regulations 1992. At the design stage particular attention must be given to incorporate safe schemes for the methods of cleaning windows and for preventing falls during maintenance such as for any high level plant.

Preparing a health and safety file is an important part of the regulations. This is a record of information for the client or person using the building, and tells them about the risks that have to be managed during future maintenance, repairs or renovation. For more information, visit the Health and Safety Executive website at www.hse.gov.uk/risk/index.htm.

It is now possible for local authorities to prosecute any of the relevant parties with respect to non compliance with the CDM Regulations after the completion of a building project, particularly if such non compliance has resulted in a death or major injury.

11 Regulation 12 of the Workplace (Health, Safety and Welfare) Regulations 1992 requires that every floor in a workplace shall be constructed in such a way which makes it suitable for use. Floors which are likely to get wet or to be subject to spillages must be of a type which does not become unduly slippery. A slip-resistant coating must be applied where necessary. You must also ensure that floors have effective means of drainage where necessary. The flooring must be fitted correctly and properly maintained.
Regulation 6 (4)(a) Schedule 1(d) states that a place of work should possess suitable and sufficient means for preventing a fall. You must therefore ensure the following:
* Stairs are constructed to help prevent a fall on the staircase; you must consider stair rises and treads as well as any landings;
* Stairs have appropriately highlighted grip nosing so as to differentiate each step and provide sufficient grip to help prevent a fall on the staircase;
* Any changes of level, such as a step between floors, which are not obvious, are marked to make them conspicuous. The markings must be fitted correctly and properly maintained;
* Any staircases are constructed so that they are wide enough in order to provide sufficient handrails, and that these are installed correctly and properly maintained. Additional handrails should be provided down the centre of particularly wide staircases where necessary;
* Stairs are suitably and sufficiently lit, and lit in such a way that shadows are not cast over the main part of the treads.

12 Every year in the UK, about 70 people are killed and around 4,000 are seriously injured as a result of falling from height. You should carefully consider the following.

* Window cleaning - where possible, install windows that can be cleaned safely from within the building.
* Internal atria - design these spaces so that glazing can be safely cleaned and maintained.
* Lighting - ensure luminaires can be safely accessed for replacement.
* Roof plant - provide safe access including walkways and roof edge protection where necessary (but these may need further planning permission).

More guidance can be found on the Health and Safety Executive website at www.hse.gov.uk/falls/index.htm.

Note: Window cleaning cradles and tracking should blend in as much as possible with the appearance of the building when not in use. If you decide to use equipment not shown in your drawings which will affect the appearance of the building, you will need to apply separately for planning permission. (I80CB)

13 You are advised to permanently mark the plant/ machinery hereby approved with the details of this permission (date of grant, registered number). This will assist in future monitoring of the equipment by the City Council if and when complaints are received.

14 This permission is governed by a legal agreement between the applicant and us under Section 106 of the Town and Country Planning Act 1990. The agreement relates to:

a) Compliance with the City Council's Code of Construction Practice, and submission of a CEMP (Construction Environmental Management Plan) to an annual cap of £37,000.
b) Provision of public art in accordance with Condition 5 to a minimum value of £50,000.
c) Costs of Highway and Public Realm works required for the development to occur.
d) Stopping up and dedication of highway and associated costs.
e) Walkways agreement for access to the public square.
f) Means to ensure that demolition and development are carried out in accordance with a programme of works to be approved by the local planning authority.
g) Replanting and replacement tree planting.
h) The costs of monitoring the S106 agreement.

15 You are advised to contact Environmental Health to discuss 'events' in the public square.

16 This site is in a conservation area. By law you must write and tell us if you want to cut, move or trim any of the trees there. You may want to discuss this first with our Tree Officer on 020 764' 6096 or 020 7641 2922. (I32AA)

17 Condition 22 requires you to submit a method statement for works to a tree(s). The method statement must be prepared by an arboricultural consultant (tree and shrub) who is registered with the Arboricultural Association, or who has the level of qualifications or experience (or both) needed to be registered. It must include details of:

* the order of work on the site, including demolition, site clearance and building work;
* who will be responsible for protecting the trees on the site;
* plans for inspecting and supervising the tree protection, and how you will report and

solve problems;

* how you will deal with accidents and emergencies involving trees;
* planned tree surgery;
* how you will protect trees, including where the protective fencing and temporary ground protection will be, and how you will maintain that fencing and protection throughout the development;
* how you will remove existing surfacing, and how any soil stripping will be carried out;
* how any temporary surfaces will be laid and removed;
* the surfacing of any temporary access for construction traffic;
* the position and depth of any trenches for services, pipelines or drains, and how they will be dug;
* site facilities, and storage areas for materials, structures, machinery, equipment or piles of soil and where cement or concrete will be mixed;
* how machinery and equipment (such as excavators, cranes and their loads, concrete pumps and piling rigs) will enter, move on, work on and leave the site;
* the place for any bonfires (if necessary);
* any planned raising or lowering of existing ground levels; and
* how any roots cut during the work will be treated.

18 Conditions 18.19 and 20 control noise from the approved machinery. It is very important that you meet the conditions and we may take legal action if you do not. You should make sure that the machinery is properly maintained and serviced regularly. (I82AA)

General Arrangement

Aerial view

Facade development

Houghton Street view

View from entrance to Old Building looking up Houghton Street.

Academic Departments

External view of Collaborative stair

Collaborative stair expressed on the square facade.

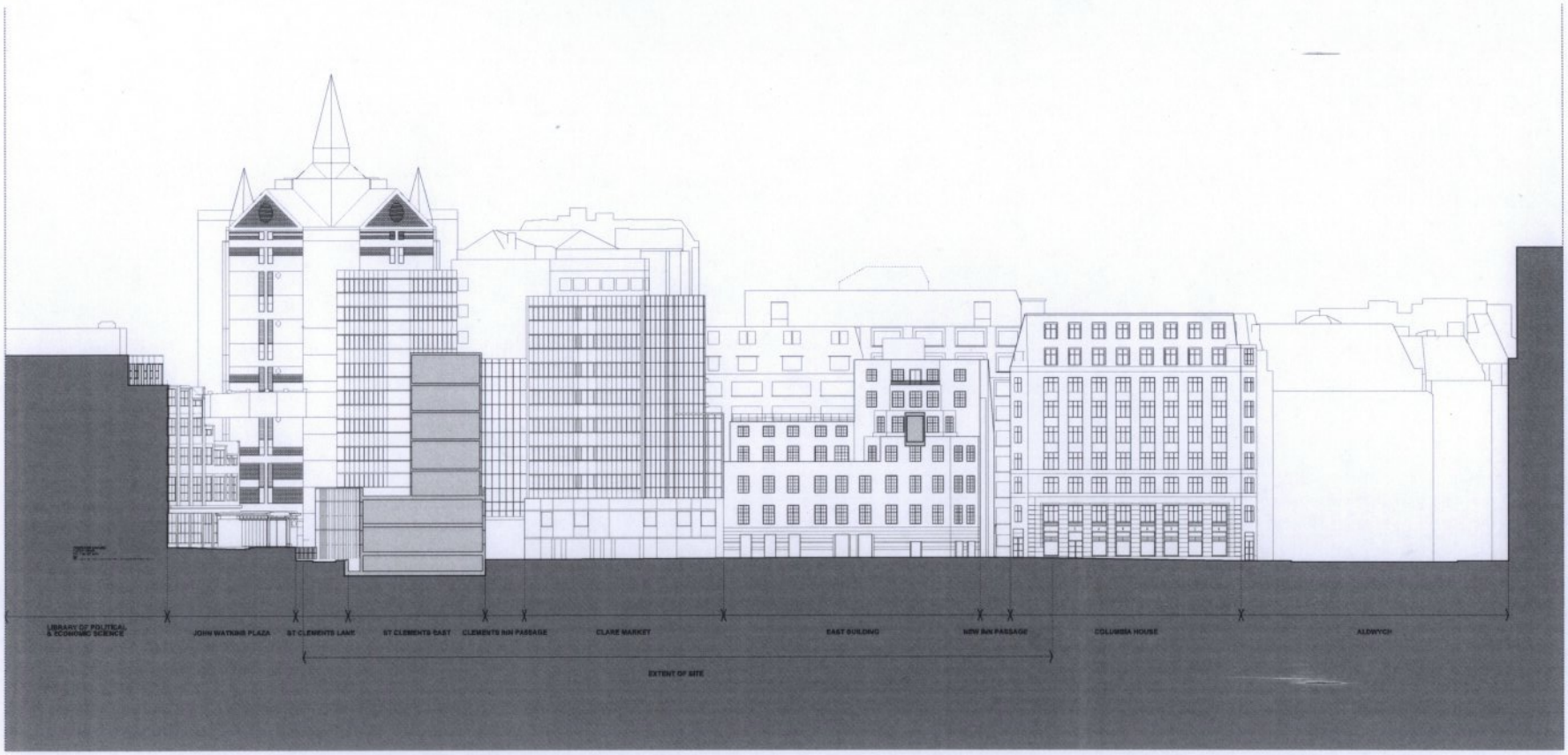

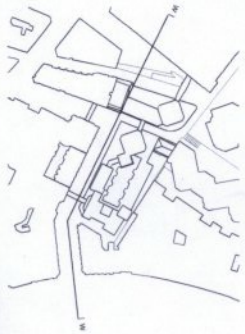

Revision	Date	Description

This drawing has been commissioned by and produced for London School of Economics and Political Science solely for the purpose of including it in a planning application for Co-ire Buildings Redevelopment and Rogers Stirk Harbour + Partners does not assume any legal responsibility for the consequences of this drawing being used for any other purpose.

All areas shown here have been measured by RSHP and have been produced at an early stage of the design. They are approximate and subject to change and are not to be relied upon for any purpose other than for the purpose of the planning application and for no other purpose. Further development of the design is likely to lead to changes to these areas and RSHP accept no legal responsibility for any use of these areas for any purpose other than supporting the planning application.

Do not scale from this drawing. The author of this drawing takes no responsibility for any dimensions obtained by measuring or scaling from this drawing and no reliance may be placed on such dimensions. If no dimension is given this has no responsibility for the validity of to scaling. The dimension specifically from the author or by site measurement.

This drawing of structural and service elements must always be checked against the relevant engineer's drawings. No reliance should be placed upon existing information shown on this drawing.

Drawing Purpose
For Planning Application

Drawn by	Checked by	Authorised by
JS	GG	TM

Project
LSE-CBR London

Contact
Rogers Stirk Harbour + Partners
Established in London formerly Richard Rogers Partnership
Thames Wharf
Rainville Road
London
W6 9HA
+44 (0)20 7385 1235
Fax 020 7385 9450
email: 2100@rsh-p.com
www.rsh-p.com

Drawing Title
GA Elevation West
Existing

© copyright Rogers Stirk Harbour + Partners all rights reserved 2014

Scale @ A1	Drawing Number	
1:200	RSHP-A-80043-E-W	
Drawing Date	Revision Date	Revision
05-12-2014	12-12-2014	P1



Revision	Date	Description
P1	19-02-2015	Issue for Planning Application

This drawing has been permitted by and produced for London School of Economics and Political Science solely for the purpose of inclusion in a planning application for Centre Building Redevelopment and Rogers Stirk Harbour + Partners does not assume any legal responsibility for the consequences of this drawing being used for any other purpose.

All areas shown have been measured by RSHP and from plans produced at an early stage of the design. They are approximate and indicative only and have been produced solely for the purpose of the planning application and for no other purpose. Further development of the design is likely to lead to changes to these areas and RSHP accept no legal responsibility for any use of these areas for any purpose other than accompanying the planning application.

Do not scale from this drawing. The author of this drawing bears no responsibility for any dimensions obtained by measuring or scaling from this drawing and no reliance may be placed on such dimensions. If no dimension is given, it is the responsibility of the recipient to ascertain the dimension specifically from the author or by site measurement.

This drawing of all areas of plant and equipment is not always to be checked against the relevant engineer's drawings, no reliance should be placed upon such information shown on this drawing.

Drawing Purpose
For Planning Application

Drawn by	Checked by	Authorised by
XX	LE	TM

Project
LSE-CBR London

Drawing Title
Illustrated Elevation West
Proposed

© copyright Rogers Stirk Harbour + Partners All rights reserved 2014

Contact
Rogers Stirk Harbour + Partners
On behalf of London School of Economics and Political Science
Telephone United +44 (0)20 7296 4700
Nationwide House Fax +44 (0)20 7296 4701
London email: info@rsh-p.com
WC2H 9NS www.rsh-p.com

Scale @ A1	Drawing Number
1:200	RSHP-A-80405-E-W
Drawing Date	**Revision Date** / **Revision**
05-12-2014	19-02-2015 / P1

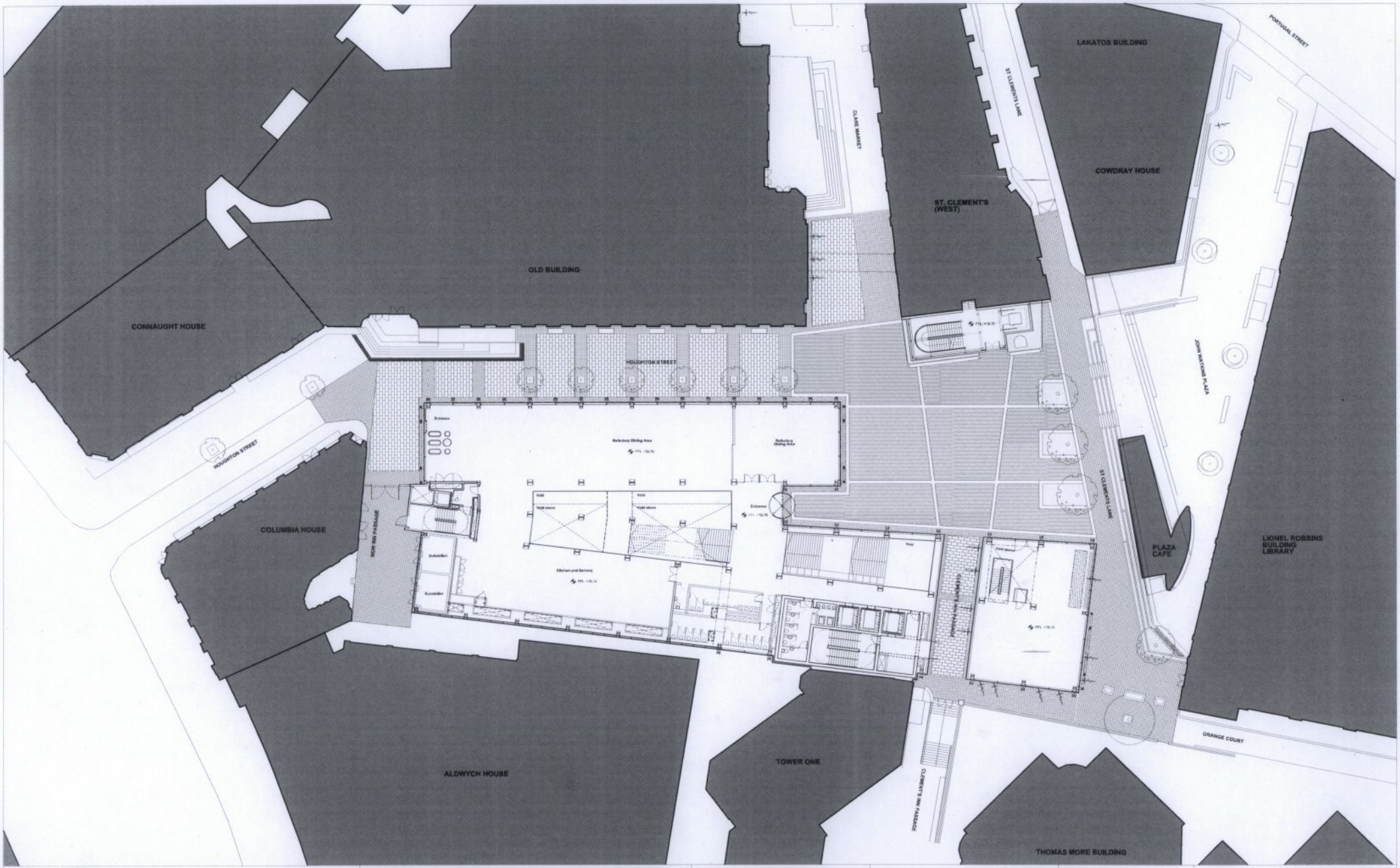

Revision	Date	Description
P1	12-12-2014	Issue for Planning Application
P2	19-02-2015	St. Clement's core & South core updated

This drawing has been commissioned by and produced for London School of Economics and Political Science solely for the purpose of inclusion in a planning application for Centre Buildings Redevelopment and Rogers Stirk Harbour + Partners does not assume any legal responsibility for the consequences of this drawing being used for any other purpose.

All areas shown have been measured by RSHP and from plans produced at an early stage of the design. They are approximate and indicative only and have been produced solely for the purpose of the planning application and for no other purpose. Further development of the design is likely to lead to changes to these areas and RSHP accept no legal responsibility for any use of these areas for any purpose other than supporting the planning application.

Do not scale from the drawing. The author of this drawing takes no responsibility for any dimensions obtained by measuring or scaling from this drawing and no reliance may be placed on such dimensions. If no dimension is given, it is the responsibility of the recipient to ascertain the dimension specifically from the author or by site measurement.

The sizing of all structural and service elements must always be checked against the relevant engineer's drawings. No reliance should be placed upon sizing information shown on this drawing.

Drawing Purpose
For Planning Application

Drawn by	Checked by	Authorised by
AW	LE	TM

N

Project
LSE-CBR London

Contact
Rogers Stirk Harbour + Partners
On behalf of London School of Economics and Political Science
Thames Wharf
Rainville Road
London
W6 9HA
tel. 020 7385 1235
fax. 020 7385 9409
email: z101300@rsh-p.com
www.rsh-p.com

Drawing Title
GA Plan
Level Ground
Proposed

© copyright Rogers Stirk Harbour + Partners, all rights reserved 2014

Scale @ A1	Drawing Number	
1:200	RSHP-A-80100-P-00	
Drawing Date	Revision Date	Revision
05-12-2014	19-02-2015	P2

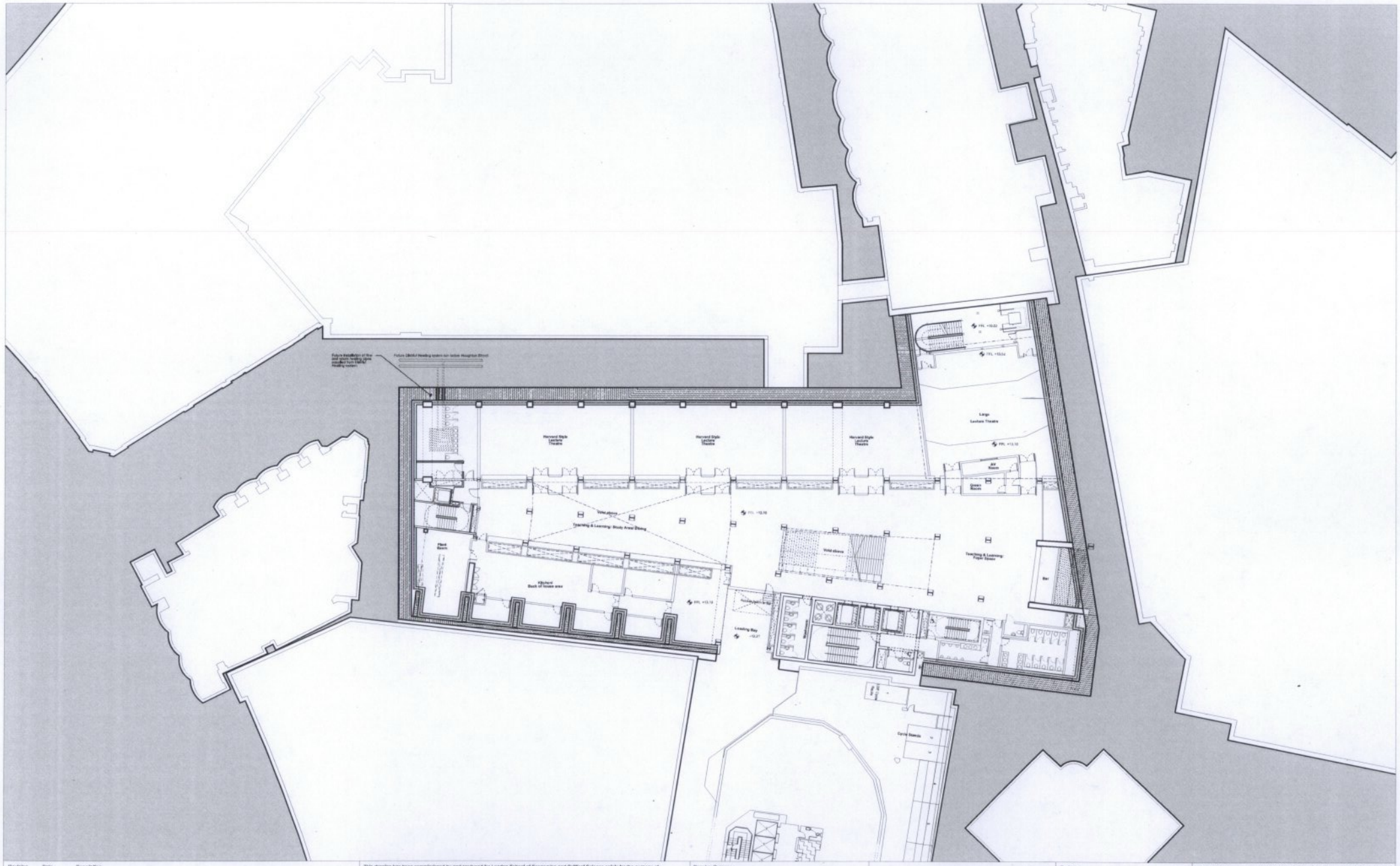

Revision	Date	Description
P1	12-12-2014	Issue for Planning Application
P2	19-02-2015	St. Clement's core & South core updated & future Network Heating provision illustrated.

This drawing has been commissioned by and produced for London School of Economics and Political Science solely for the purpose of inclusion in a planning application for Centre Buildings Redevelopment and Rogers Stirk Harbour + Partners does not assume any legal responsibility for the consequences of this drawing being used for any other purpose.

All areas shown have been measured by RSHP and from plans produced at an early stage of the design. They are approximate and indicative only and have been produced solely for the purpose of the planning application and for no other purpose. Further development of the design is likely to lead to changes to these areas and RSHP accept no legal responsibility for any use of these areas for any purpose other than supporting the planning application.

Do not scale from the drawing. The author of this drawing takes no responsibility for any dimensions obtained by measuring or scaling from this drawing and no reliance may be placed on such dimensions. If no dimension is given, it is the responsibility of the recipient to ascertain the dimension specifically from the author or by site measurement.

The sizing of all structural and service elements must always be checked against the relevant engineer's drawings. No reliance should be placed upon sizing information shown on this drawing.

Drawing Purpose

For Planning Application

Drawn by	Checked by	Authorised by
AW	LE	TM

N

Project

LSE-CBR London

Contact

Rogers Stirk Harbour + Partners
On behalf of London School of Economics and Political Science

Thames Wharf
Rainville Road
London
W6 9HA

tel: 020 7385 1235
fax: 020 7385 9408
email: z10160@rsh-p.com
www.rsh-p.com

Drawing Title

GA Plan
Level B1
Proposed

© copyright Rogers Stirk Harbour + Partners, all rights reserved 2014

Scale @ A1	Drawing Number	
1:200	RSHP-A-80099-P-B1	
Drawing Date	Revision Date	Revision
05-12-2014	19-02-2015	P2

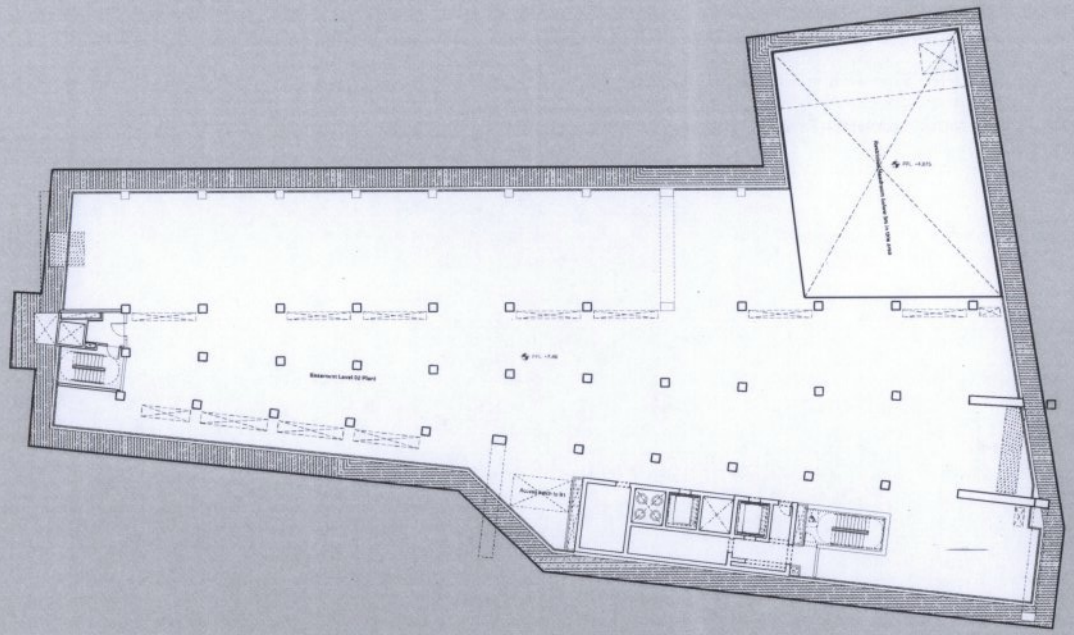

Revision	Date	Description
P1	12-12-2014	Issue for Planning Application
P2	19-02-2015	St. Clement's core & South core updated

This drawing has been commissioned by and produced for London School of Economics and Political Science solely for the purpose of inclusion in a planning application for Centre Buildings Redevelopment.and Rogers Stirk Harbour + Partners does not assume any legal responsibility for the consequences of this drawing being used for any other purpose.

All areas shown have been measured by RSHP and from plans produced at an early stage of the design. They are approximate and indicative only and have been produced solely for the purpose of the planning application and for no other purpose. Further development of the design is likely to lead to changes to these areas and RSHP accept no legal responsibility for any use of these areas for any purpose other than supporting the planning application.

Do not scale from the drawing. The author of this drawing takes no responsibility for any dimensions obtained by measuring or scaling from this drawing and no reliance may be placed on such dimensions. If no dimension is given, it is the responsibility of the recipient to ascertain the dimension specifically from the author or by site measurement.

The sizing of all structural and service elements must always be checked against the relevant engineer's drawings. No reliance should be placed upon sizing information shown on this drawing.

Drawing Purpose
For Planning Application

Drawn by	Checked by	Authorised by
AW	LE	TM

N

Project
LSE-CBR London

Contact
Rogers Stirk Harbour + Partners
On behalf of London School of Economics and Political Science

Thames Wharf
Rainville Road
London
W6 9HA

tel: 020 7385 1235
fax: 020 7385 9409
email: r70199@rshp.com
www.rshp.com

Drawing Title
GA Plan
Level B2
Proposed

© copyright Rogers Stirk Harbour + Partners, all rights reserved 2014

Scale @ A1	Drawing Number	
1:200	RSHP-A-80098-P-B2	
Drawing Date	**Revision Date**	**Revision**
05-12-2014	19-02-2015	P2

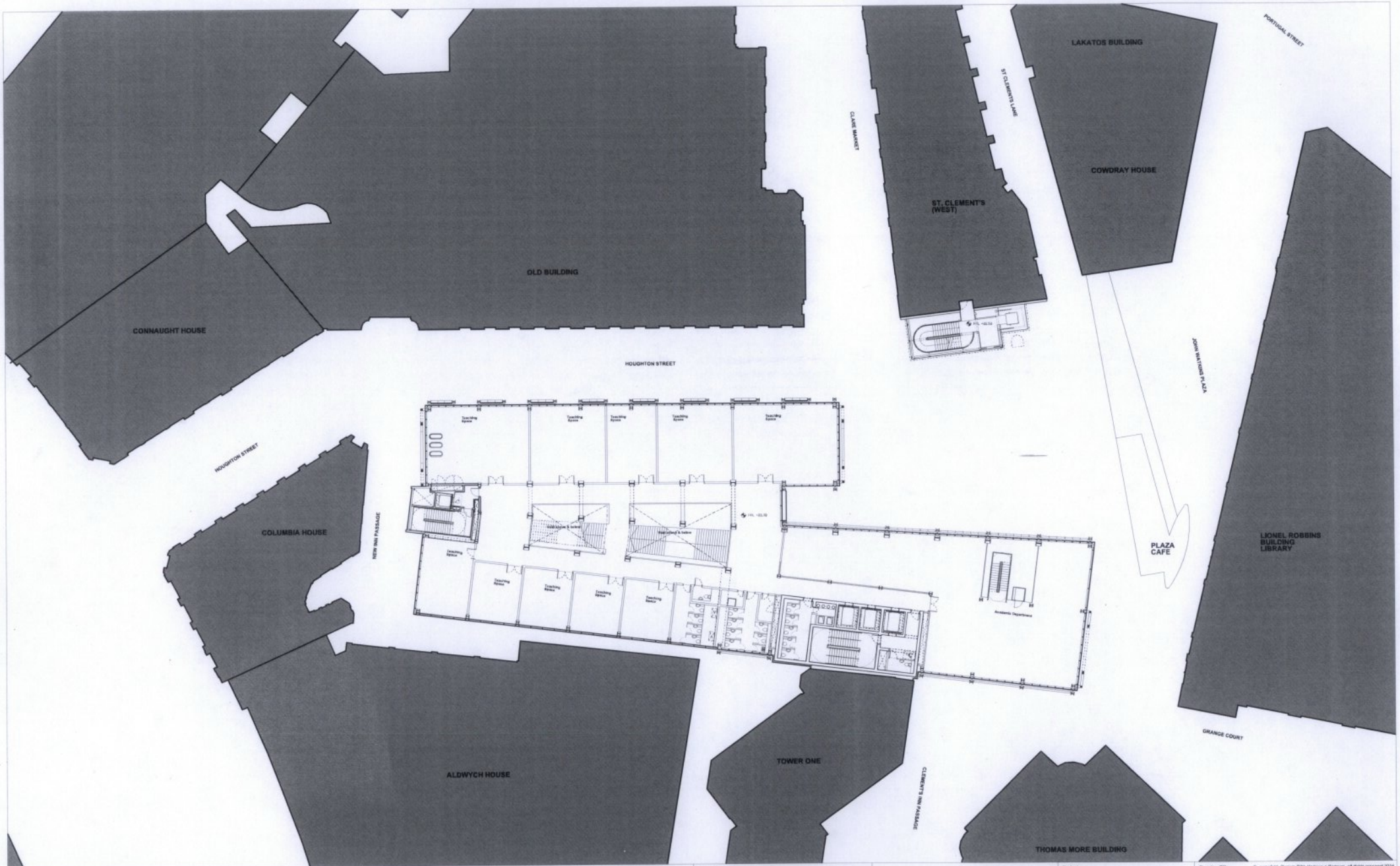

Revision	Date	Description
P1	12-12-2014	Issue for Planning Application
P2	19-02-2015	St. Clement's core & South core updated

This drawing has been commissioned by and produced for London School of Economics and Political Science solely for the purpose of inclusion in a planning application for Centre Buildings Redevelopment and Rogers Stirk Harbour + Partners does not assume any legal responsibility for the consequences of this drawing being used for any other purpose.

All areas shown have been measured by RSHP and from plans produced at an early stage of the design. They are approximate and indicative only and have been produced solely for the purpose of the planning application and for no other purpose. Further development of the design is likely to lead to changes to these areas and RSHP accept no legal responsibility for any use of these areas for any purpose other than supporting the planning application.

Do not scale from the drawing. The author of this drawing takes no responsibility for any dimensions obtained by measuring or scaling from this drawing and no reliance may be placed on such dimensions. If no dimension is given, it is the responsibility of the recipient to ascertain the dimension specifically from the author or by site measurement.

The siting of all structural and service elements must always be checked against the relevant engineer's drawings. No reliance should be placed upon siting information shown on this drawing.

Drawing Purpose
For Planning Application

Drawn by	Checked by	Authorised by
AW	LE	TM

N

Project
LSE-CBR London

Contact
Rogers Stirk Harbour + Partners
On behalf of London School of Economics and Political Science

Thames Wharf
Rainville Road
London
W6 0HA

tel: 020 7385 1235
fax: 020 7385 8408
email: _r101599@rsh-p.com
www.rsh-p.com

Drawing Title
GA Plan
Level 01
Proposed

© copyright Rogers Stirk Harbour + Partners, all rights reserved 2014

Scale @ A1	Drawing Number
1:200	RSHP-A-80101-P-01

Drawing Date	Revision Date	Revision
05-12-2014	19-02-2015	P2

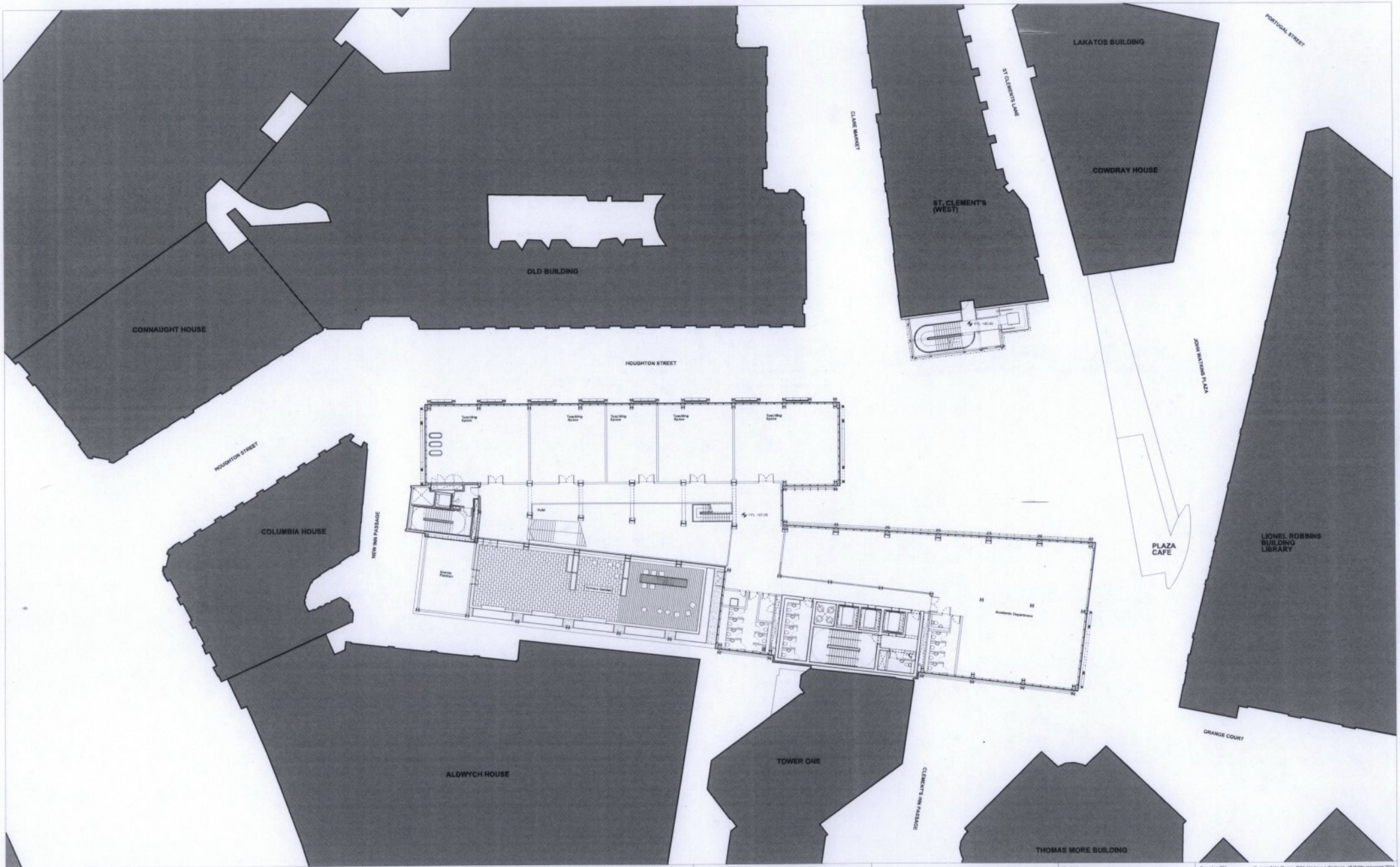

Revision	Date	Description
P1	12-12-2014	Issue for Planning Application
P2	19-02-2015	St. Clement's core & Roof-core updated

This drawing has been commissioned by and produced for London School of Economics and Political Science solely for the purpose of inclusion in a planning application for Centre Buildings Redevelopment and Rogers Stirk Harbour + Partners does not assume any legal responsibility for the consequences of this drawing being used for any other purpose.

All areas shown have been measured by RSHP and from plans produced at an early stage of the design. They are approximate and indicative only and have been produced solely for the purpose of the planning application and for no other purpose. Further development of the design is likely to lead to changes to these areas and RSHP accept no legal responsibility for any use of these areas for any purpose other than supporting the planning application.

Do not scale from the drawing. The author of this drawing takes no responsibility for any dimensions obtained by measuring or scaling from this drawing and no reliance may be placed on such dimensions. If no dimension is given, it is the responsibility of the recipient to ascertain the dimension specifically from the author or by site measurement.

The siting of all structural and service elements must always be checked against the relevant engineer's drawings. No reliance should be placed upon siting information shown on this drawing.

Drawing Purpose
For Planning Application

Drawn by	Checked by	Authorised by
AW	LE	TM

N

Project
LSE-CBR London

Contact
Rogers Stirk Harbour + Partners
On behalf of London School of Economics and Political Science
Thames Wharf
Rainville Road
London
W6 9HA
tel: 020 7385 1235
fax: 020 7385 9408
email: J10169@rshp.com
www.rshp.com

Drawing Title
GA Plan
Level 02
Proposed

© copyright Rogers Stirk Harbour + Partners, all rights reserved 2014

Scale @ A1	Drawing Number	
1:200	RSHP-A-80102-P-02	
Drawing Date	Revision Date	Revision
05-12-2014	19-02-2015	P2

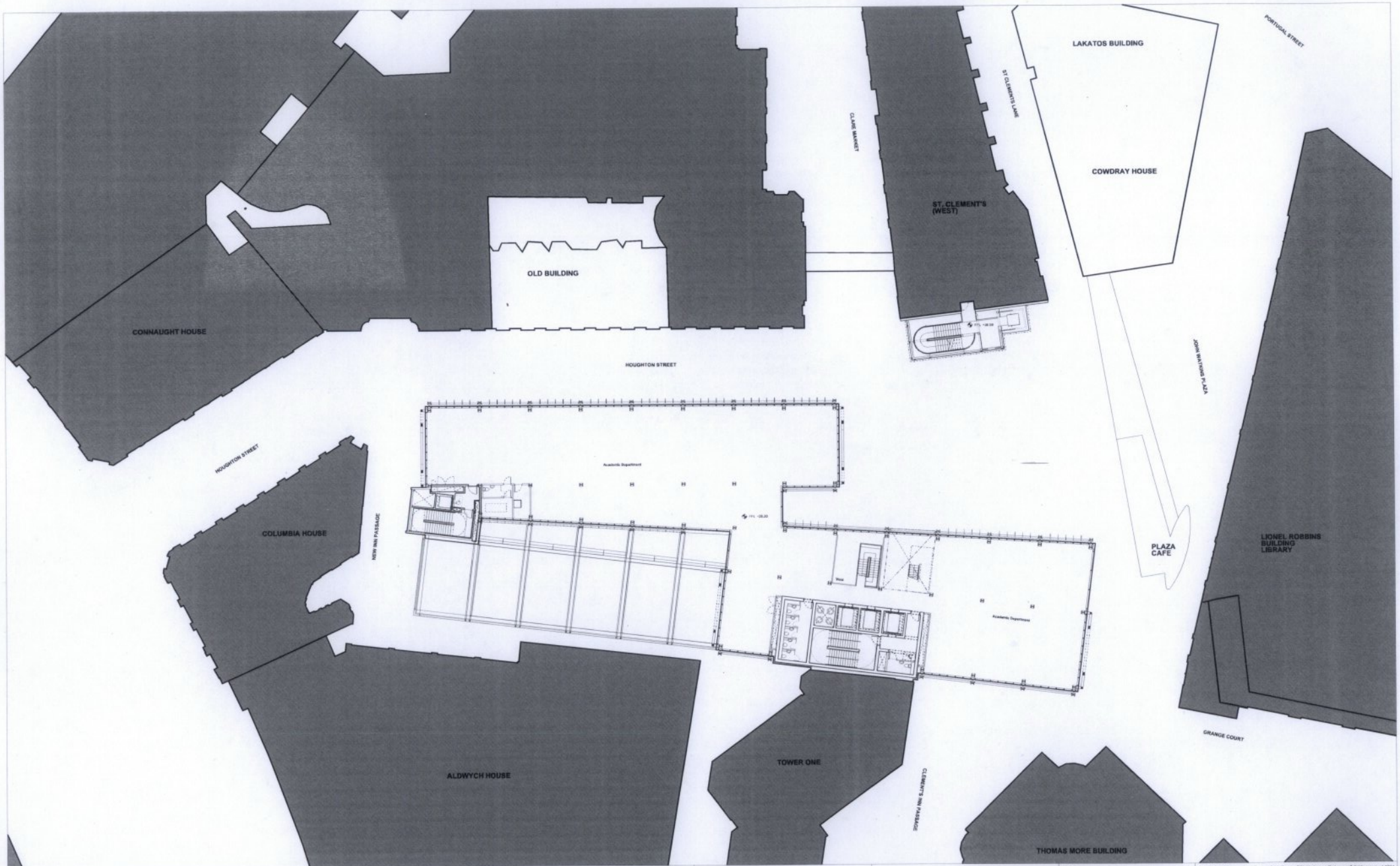

Revision	Date	Description
P2	19-02-2015	St. Clement's core updated

This drawing has been commissioned by and produced for London School of Economics and Political Science solely for the purpose of inclusion in a planning application for Centre Buildings Redevelopment and Rogers Stirk Harbour + Partners does not assume any legal responsibility for the consequences of this drawing being used for any other purpose.

All areas shown have been measured by RSHP and from plans produced at an early stage of the design. They are approximate and indicative only and have been produced solely for the purpose of the planning application and for no other purpose. Further development of the design is likely to lead to changes to these areas and RSHP accept no legal responsibility for any use of these areas for any purpose other than supporting the planning application.

Do not scale from the drawing. The author of this drawing takes no responsibility for any dimensions obtained by measuring or scaling from this drawing and no reliance may be placed on such dimensions. If no dimension is given, it is the responsibility of the recipient to ascertain the dimension specifically from the author or by site measurement.

The sizing of all structural and service elements must always be checked against the relevant engineer's drawings. No reliance should be placed upon sizing information shown on this drawing.

Drawing Purpose
For Planning Application

Drawn by	Checked by	Authorised by
AW	LE	TM

N

Project
LSE-CBR London

Contact
Rogers Stirk Harbour + Partners
On behalf of London School of Economics and Political Science

Thames Wharf
Rainville Road
London
W6 9HA
tel: 020 7385 1235
fax: 020 7385 9409
email: r70100@rshp.com
www.rshp.com

Drawing Title
GA Plan
Level 05
Proposed

© copyright Rogers Stirk Harbour + Partners, all rights reserved 2014

Scale @ A1	Drawing Number	
1:200	RSHP-A-80105-P-05	
Drawing Date	Revision Date	Revision
05-12-2014	19-02-2015	P2

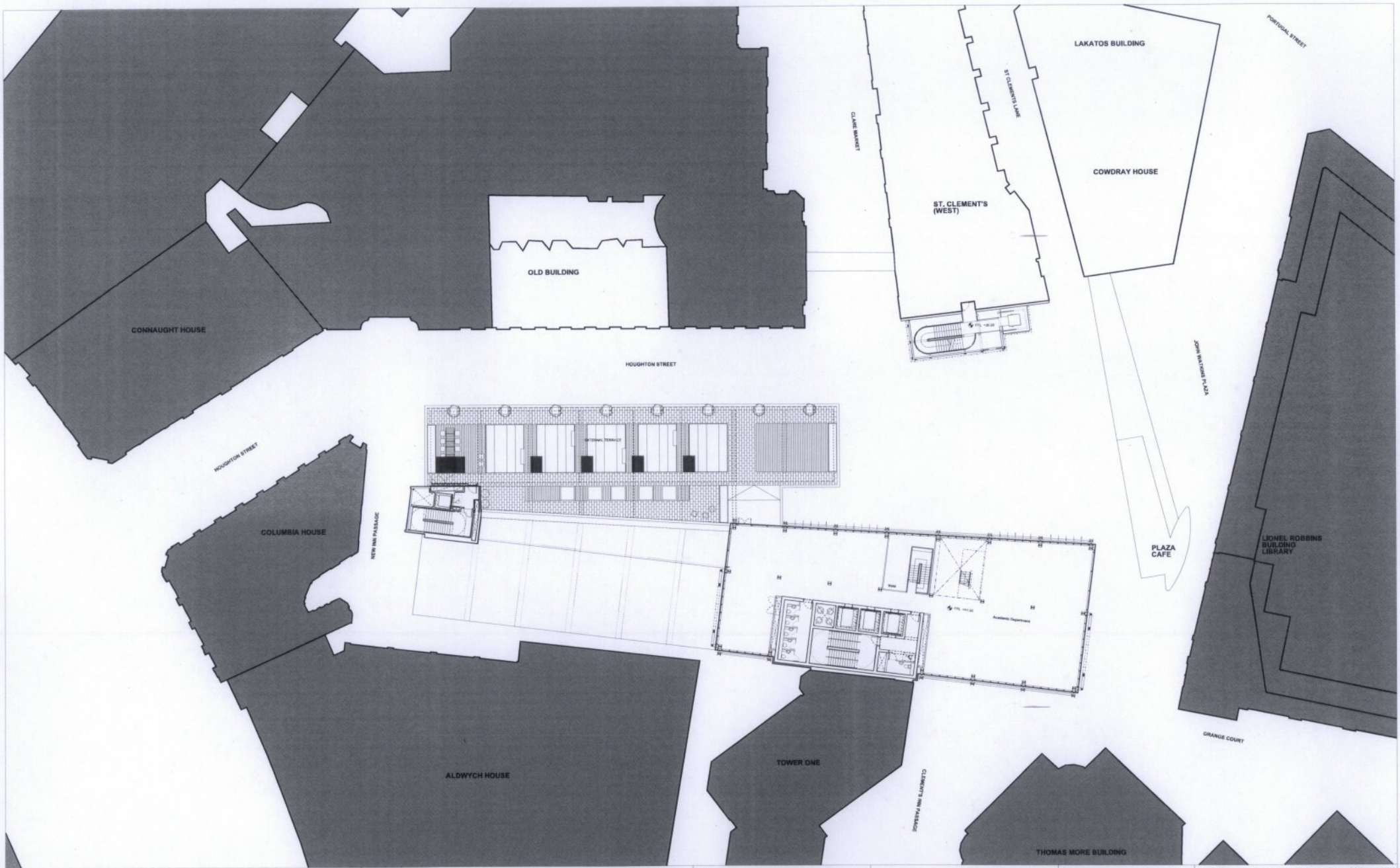

Revision	Date	Description
P1	12-12-2014	Issue for Planning Application
P2	19-02-2015	St. Clement's core & SWP core updated

This drawing has been commissioned by and produced for London School of Economics and Political Science solely for the purpose of inclusion in a planning application for Combs Buildings Redevelopment and Rogers Stirk Harbour + Partners does not assume any legal responsibility for the consequences of this drawing being used for any other purpose.

All areas shown have been measured by RSHP and from plans produced at an early stage of the design. They are approximate and indicative only and have been produced solely for the purpose of the planning application and for no other purpose. Further development of the design is likely to lead to changes to these areas and RSHP accept no legal responsibility for any use of these areas for any purpose other than supporting the planning application.

Do not scale from the drawing. The author of this drawing takes no responsibility for any dimensions obtained by measuring or scaling from this drawing and no reliance may be placed on such dimensions. If no dimension is given, it is the responsibility of the recipient to ascertain the dimension specifically from the author or by site measurement.

The sizing of all structural and service elements must always be checked against the relevant engineer's drawings. No reliance should be placed upon sizing information shown on this drawing.

Drawing Purpose
For Planning Application

Drawn by	Checked by	Authorised by
AW	LE	TM

N

Project
LSE-CBR London

Contact
Rogers Stirk Harbour + Partners
On behalf of London School of Economics and Political Science
Thames Wharf
Rainville Road
London
W6 9HA
tel: 020 7385 1235
fax: 020 7385 9408
email: r16100@rsh-p.com
www.rsh-p.com

Drawing Title
GA Plan
Level 06
Proposed

© copyright Rogers Stirk Harbour + Partners, all rights reserved 2014

Scale @ A1	Drawing Number	
1:200	RSHP-A-80106-P-06	
Drawing Date	Revision Date	Revision
05-12-2014	19-02-2015	P2

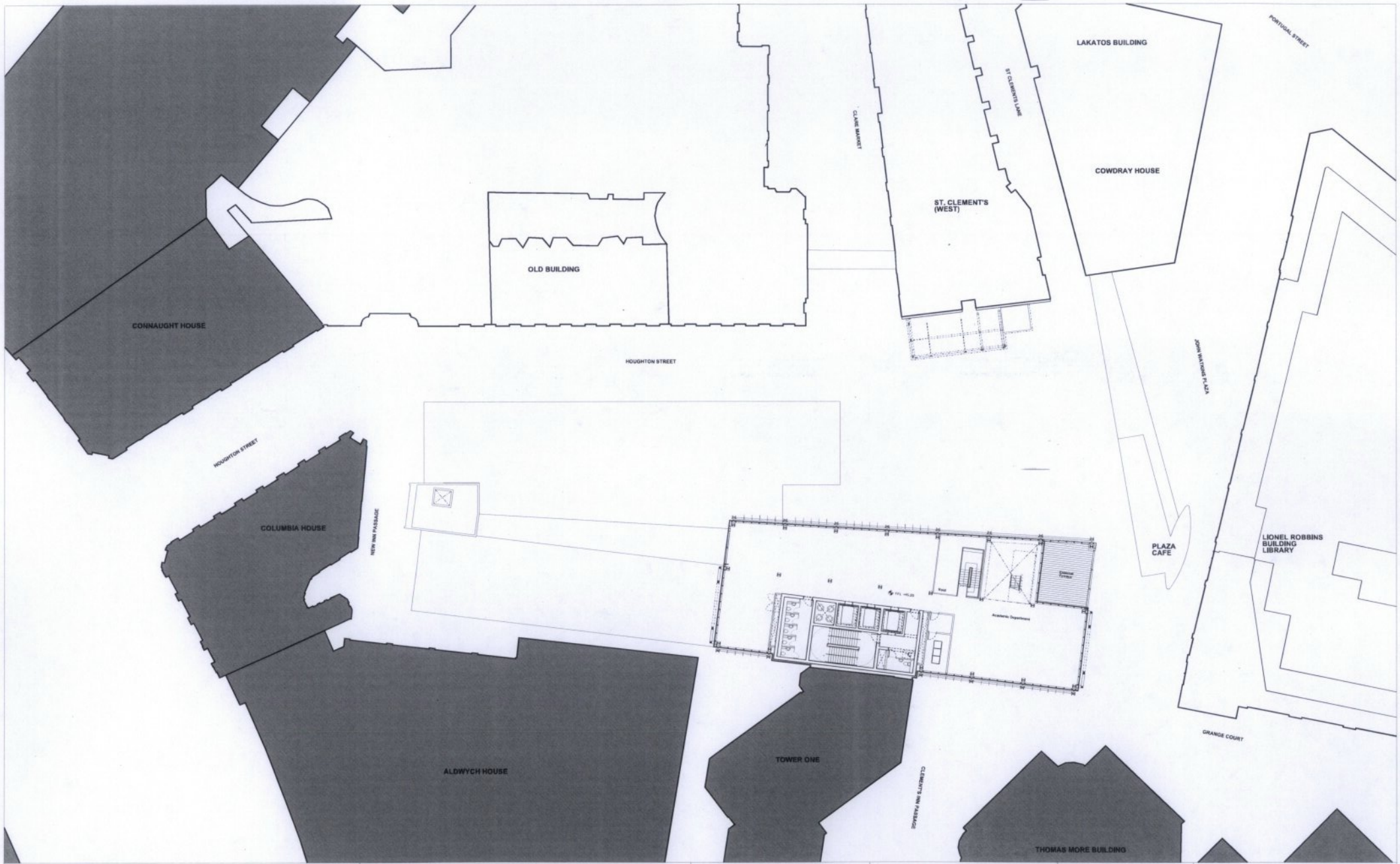

Revision	Date	Description
P1	12-12-2014	Issue for Planning Application
P2	19-02-2015	St. Clement's core & South core updated

This drawing has been commissioned by and produced for London School of Economics and Political Science solely for the purpose of inclusion in a planning application for Centre Buildings Redevelopment and Rogers Stirk Harbour + Partners does not assume any legal responsibility for the consequences of this drawing being used for any other purpose.

All areas shown have been measured by RSHP and from plans produced at an early stage of the design. They are approximate and indicative only and have been produced solely for the purpose of the planning application and for no other purpose. Further development of the design is likely to lead to changes to these areas and RSHP accept no legal responsibility for any use of these areas for any purpose other than supporting the planning application.

Do not scale from the drawing. The author of this drawing takes no responsibility for any dimensions obtained by measuring or scaling from this drawing and no reliance may be placed on such dimensions. If no dimension is given, it is the responsibility of the recipient to ascertain the dimension specifically from the author or by site measurement.

The sizing of all structural and service elements must always be checked against the relevant engineer's drawings. No reliance should be placed upon sizing information shown on this drawing.

Drawing Purpose
For Planning Application

Drawn by	Checked by	Authorised by
AW	GG	TM

N

Project
LSE-CBR London

Contact
Rogers Stirk Harbour + Partners
On behalf of London School of Economics and Political Science
Thames Wharf
Rainville Road
London
W6 9HA
tel: 020 7385 1235
fax: 020 7385 8408
email: rshp@rshp.com
www.rshp.com

Drawing Title
GA Plan
Level 07
Proposed

© copyright Rogers Stirk Harbour + Partners, all rights reserved 2014

Scale @ A1	Drawing Number	
1:200	RSHP-A-80107-P-07	
Drawing Date	Revision Date	Revision
05-12-2014	19-02-2015	P2

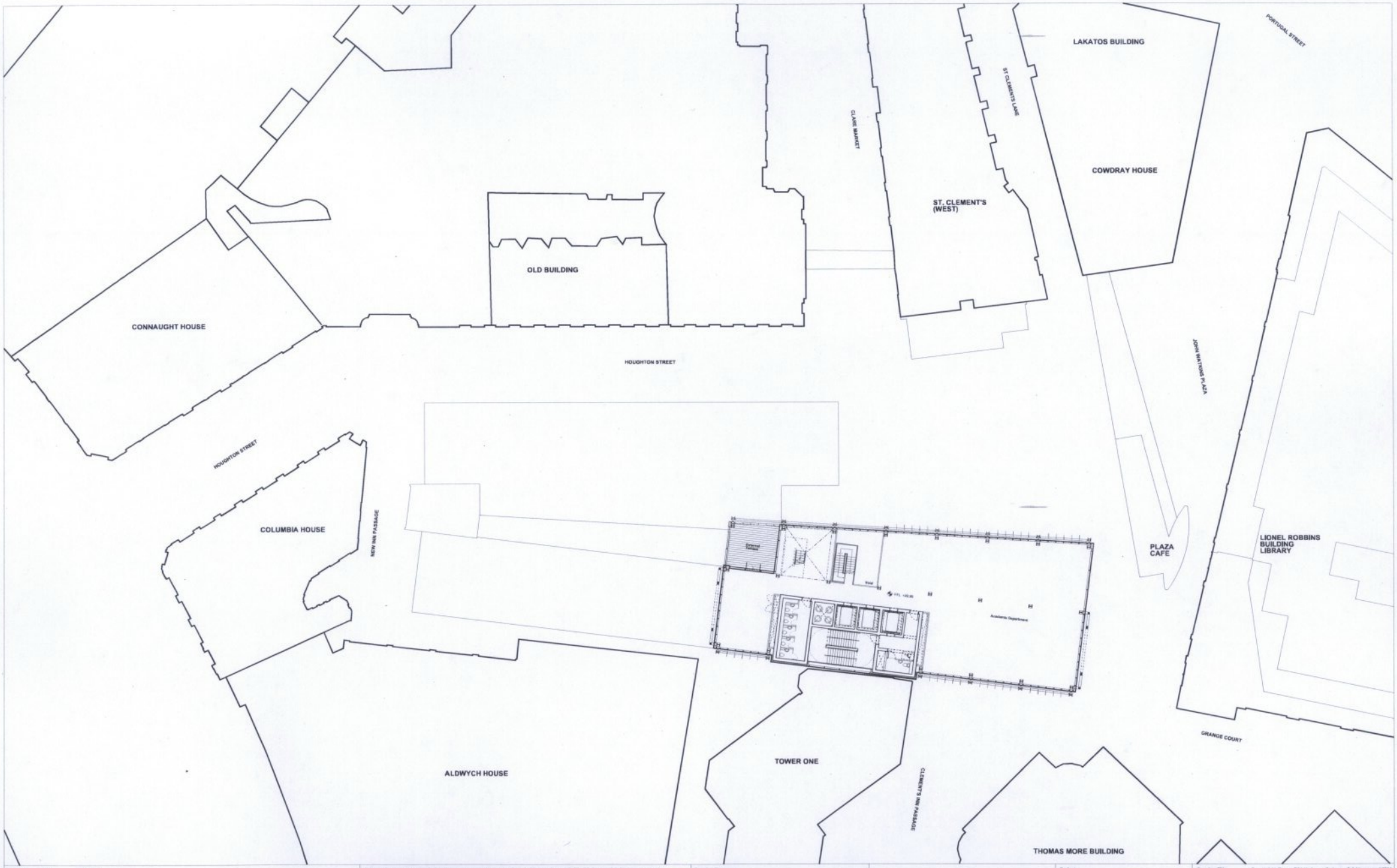

Revision	Date	Description
P1	12-12-2014	Issue for Planning Application
P2	19-02-2015	St. Clement's Core and South Core updated

This drawing has been commissioned by and produced for London School of Economics and Political Science solely for the purpose of inclusion in a planning application for Centre Buildings Redevelopment and Rogers Stirk Harbour + Partners does not assume any legal responsibility for the consequences of this drawing being used for any other purpose.

All areas shown have been measured by RSHP and from plans produced at an early stage of the design. They are approximate and indicative only and have been produced solely for the purpose of the planning application and for no other purpose. Further development of the design is likely to lead to changes to these areas and RSHP accept no legal responsibility for any use of these areas for any purpose other than supporting the planning application.

Do not scale from the drawing. The author of this drawing takes no responsibility for any dimensions obtained by measuring or scaling from this drawing and no reliance may be placed on such dimensions. If no dimension is given, it is the responsibility of the recipient to ascertain the dimension specifically from the author or by site measurement.

The sizing of all structural and service elements must always be checked against the relevant engineer's drawings. No reliance should be placed upon sizing information shown on this drawing.

Drawing Purpose
For Planning Application

Drawn by	Checked by	Authorised by
AW	LE	TM

N

Project
LSE-CBR London

Contact
Rogers Stirk Harbour + Partners
On behalf of London School of Economics and Political Science

Thames Wharf
Rainville Road
London
W6 9HA

tel: 020 7385 1235
fax: 020 7385 8409
email: z10100@rshp.com
www.rshp.com

Drawing Title
GA Plan
Level 11
Proposed

© copyright Rogers Stirk Harbour + Partners, all rights reserved 2014

Scale @ A1	Drawing Number	
1:200	RSHP-A-80111-P-11	
Drawing Date	Revision Date	Revision
05-12-2014	19-02-2015	P2

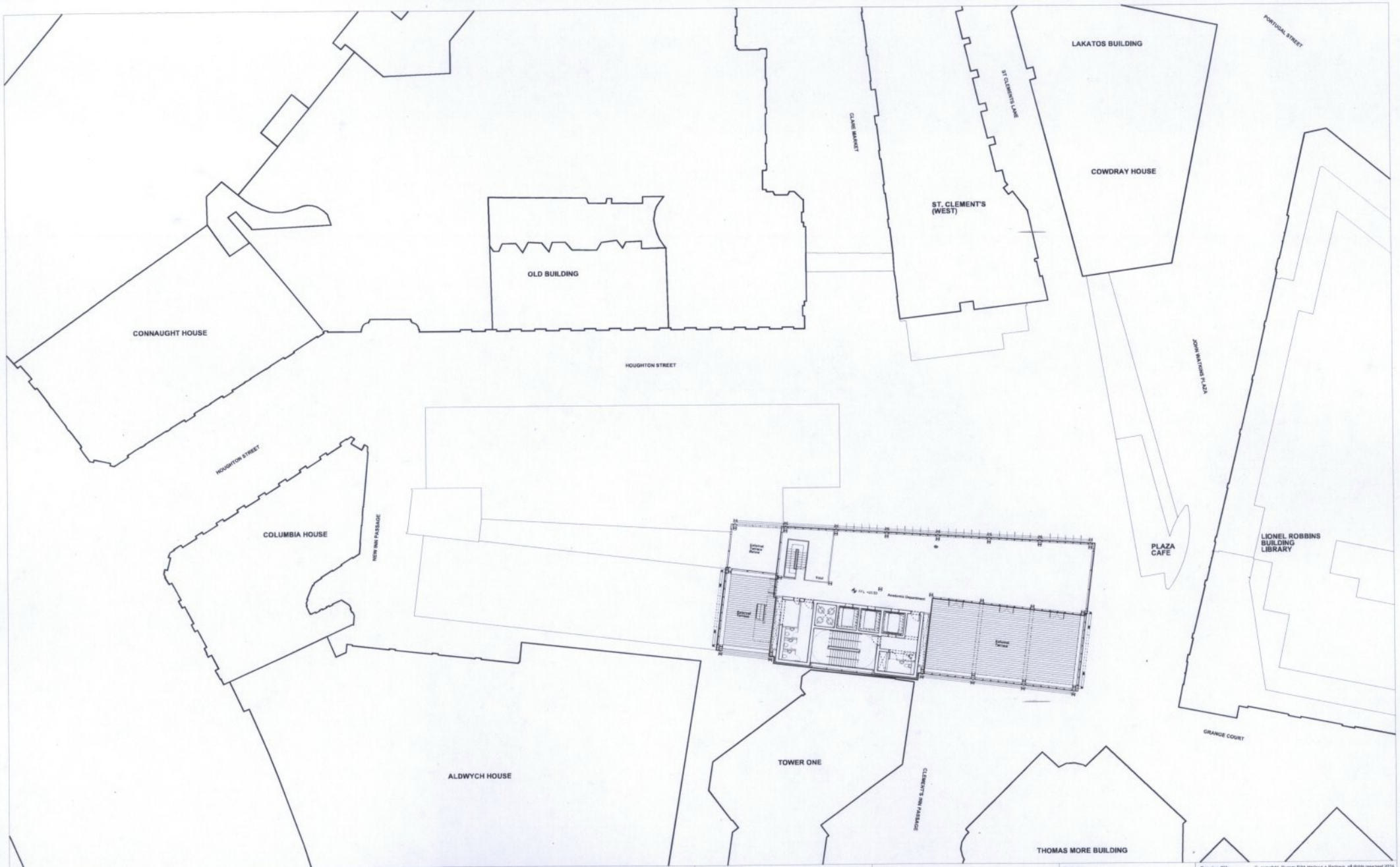

Revision	Date	Description
P1	12-12-2014	Issue for Planning Application
P2	19-02-2015	St. Clements core and South core updated. Larger terrace introduced. Stair to level 13 plant moved south.

This drawing has been commissioned by and produced for London School of Economics and Political Science solely for the purpose of inclusion in a planning application for Centre Buildings Redevelopment and Rogers Stirk Harbour + Partners does not assume any legal responsibility for the consequences of this drawing being used for any other purpose.

All areas shown have been measured by RSHP and from plans produced at an early stage of the design. They are approximate and indicative only and have been produced solely for the purpose of the planning application and for no other purpose. Further development of the design is likely to lead to changes to these areas and RSHP accept no legal responsibility for any use of these areas for any purpose other than supporting the planning application.

Do not scale from the drawing. The author of this drawing takes no responsibility for any dimensions obtained by measuring or scaling from this drawing and no reliance may be placed on such dimensions. If no dimension is given, it is the responsibility of the recipient to ascertain the dimension specifically from the author or by site measurement.

The sizing of all structural and service elements must always be checked against the relevant engineer's drawings. No reliance should be placed upon sizing information shown on this drawing.

Drawing Purpose
For Planning Application

Drawn by	Checked by	Authorised by
AW	LE	TM

N

Project
LSE-CBR London

Contact
Rogers Stirk Harbour + Partners
On behalf of London School of Economics and Political Science

Thames Wharf
Rainville Road
London
W6 9HA
tel: 020 7385 1235
fax: 020 7385 9408
email: z10100@rsh-p.com
www.rsh-p.com

Drawing Title
GA Plan
Level 12
Proposed

© copyright Rogers Stirk Harbour + Partners, all rights reserved 2014

Scale @ A1	Drawing Number
1:200	RSHP-A-80112-P-12

Drawing Date	Revision Date	Revision
05-12-2014	19-02-2015	P2

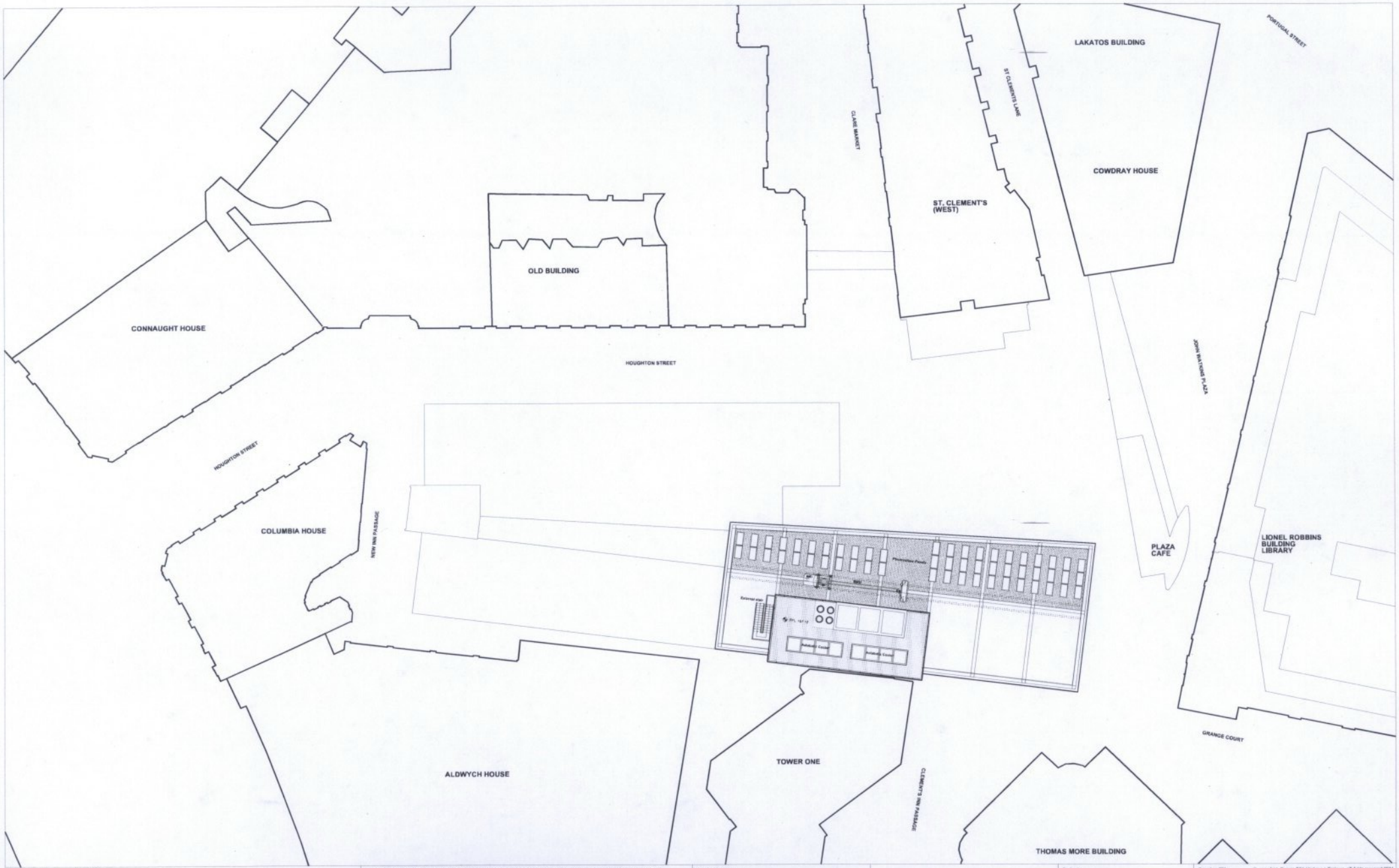

Revision	Date	Description
P1	12-12-2014	Issue for Planning Application
P2	19-02-2015	St. Clement's core and South core updated. Stair to plant moved south.

This drawing has been commissioned by and produced for London School of Economics and Political Science solely for the purpose of inclusion in a planning application for Centre Buildings Redevelopment and Rogers Stirk Harbour + Partners does not assume any legal responsibility for the consequences of this drawing being used for any other purpose.

All areas shown have been measured by RSHP and from plans produced at an early stage of the design. They are approximate and indicative only and have been produced solely for the purpose of the planning application and for no other purpose. Further development of the design is likely to lead to changes to these areas and RSHP accept no legal responsibility for any use of these areas for any purpose other than supporting the planning application.

Do not scale from the drawing. The author of this drawing takes no responsibility for any dimensions obtained by measuring or scaling from this drawing and no reliance may be placed on such dimensions. If no dimension is given, it is the responsibility of the recipient to ascertain the dimension specifically from the author or by site measurement.

The sizing of all structural and service elements must always be checked against the relevant engineer's drawings. No reliance should be placed upon sizing information shown on this drawing.

Drawing Purpose
For Planning Application

Drawn by	Checked by	Authorised by
AW	LE	TM

N

Project
LSE-CBR London

Contact
Rogers Stirk Harbour + Partners
On behalf of London School of Economics and Political Science

Thames Wharf
Rainville Road
London
W6 9HA

tel: 020 7385 1235
fax: 020 7385 9409
email: z10100@rsh-p.com
www.rsh-p.com

Drawing Title
GA Plan
Level 13
Proposed

© copyright Rogers Stirk Harbour + Partners, all rights reserved 2014

Scale @ A1	Drawing Number	
1:200	RSHP-A-80113-P-13	
Drawing Date	**Revision Date**	**Revision**
05-12-2014	19-02-2015	P2

MATERIALS DESCRIPTION

1. Unitised curtain walling system framing (light grey)
a: Clear fixed double glazed panel
b: Translucent double glazed panel
c: Anodised aluminium panel with insulated and PPC aluminium backing panel
d: High-performance inward opening side-hung anodised aluminium insulation panel and PPC aluminium backing panel
e: high-performance top-hung outward opening windows; double-glazing, motorised and non-motorised
f: Anodised aluminium panel with insulated spandrel and PPC aluminium backing panel (dark grey)
g: Fixed clear double glazed units with interstitial blinds
h: Clear fixed single glazed panel
j: Anodised aluminium ventilation louvre panel

2. Independent shading structure (dark grey) which includes a combination of grey white fins laterally restrained and vertically supported using thermally-broken connections

3. Intermediate light-weight shading fins which includes a combination of predominantly natural anodised external louvres with a slim vertical band or bands of highlight colour (orange) to the shading elements

4. Anodised aluminium insulated panel with PPC aluminium backing panel (light grey)
a: Ventilation louvre panel

5. Reconstituted stone veil cladding
a: Stone rainscreen with drained and ventilated gap between stone. Stone to be fixed on aluminium or stainless steel backing support structure
b: Stone Infill to shading structure between ground floor and level 01

6. Glass balustrades to roofs and terraces

7. Fixed clear double height double glazed panels

8. Translucent double glazed panels

9. Anodised aluminium ventilated louvre panels with concealed door for access to UKPN switchroom

10. Ground floor curtain walling
a: Double glazed fixed clear panel with fritted perimeter and face-sealed
b: Double glazed full height motorised doors
c: Double glazed high-performance top-hung outward opening motorised windows
d: Translucent double glazed panel
e: Translucent double glazed high-performance top-hung outward opening motorised windows

11. External steel structural bracing (grey white)

12. Building maintenance unit (BMU)

13. Inclined photovoltaic panels

14. Red soffit to external terrace

15. Lift Motorooms (grey white)

16: Stainless steel flues

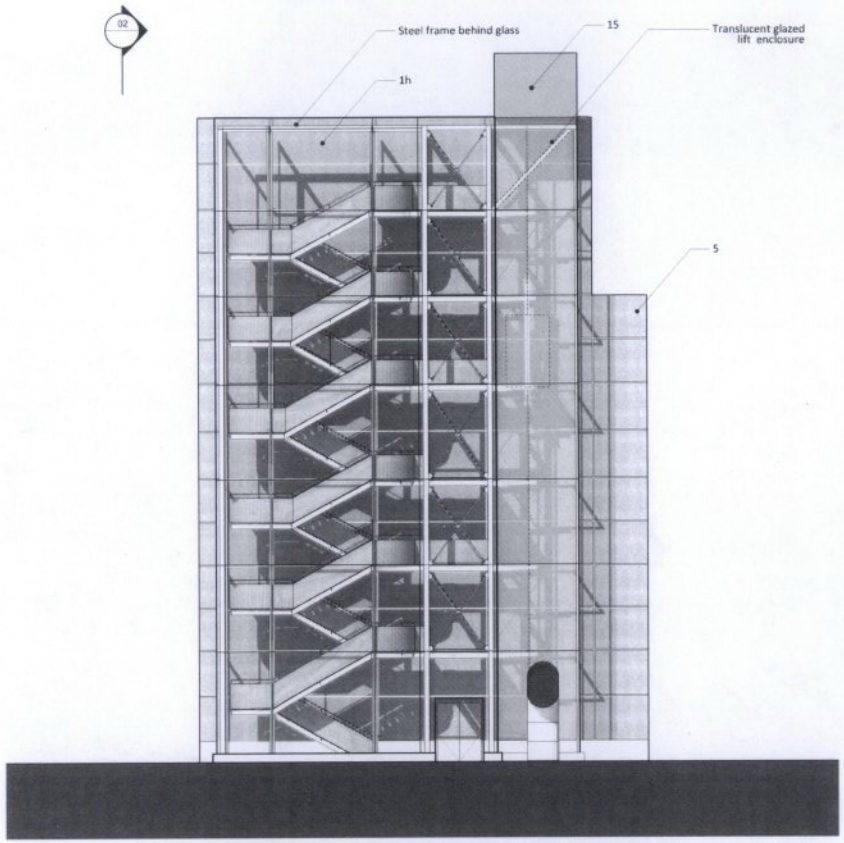

01 ELEVATION

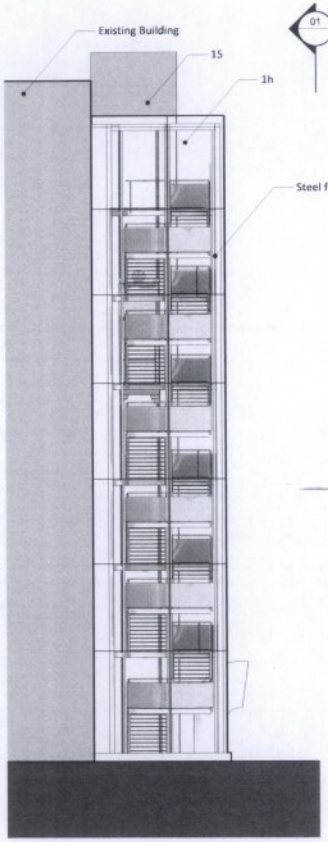

02 SECTION A

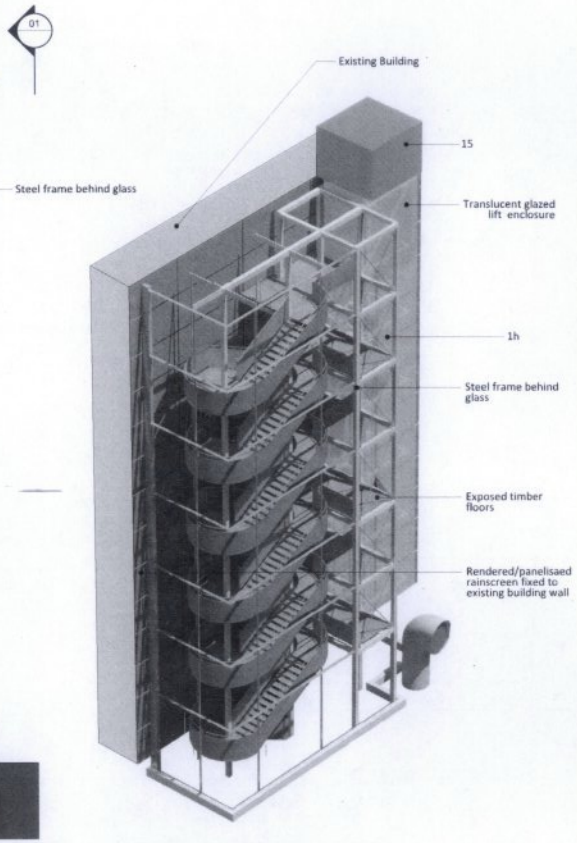

03 3D Visual

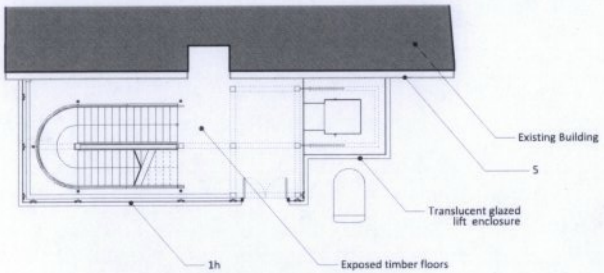

04 PLAN

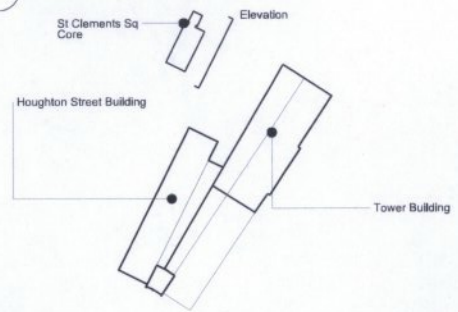

KEY PLAN

Revision	Date	Description
P01	12-12-2014	Issue for Planning Application
P02	19-02-2015	Core updated. Balustrades & lift shaft cladding amended. Ventilation trumpet indicated.

This drawing has been commissioned by and produced for London School of Economics and Political Science solely for the purpose of inclusion in a planning application for Centre Buildings Redevelopment and Rogers Stirk Harbour + Partners does not assume any legal responsibility for the consequences of this drawing being used for any other purpose.

All areas shown have been measured by RSHP and from plans produced at an early stage of the design. They are approximate and indicative only and have been produced solely for the purpose of the planning application and for no other purpose. Further development of the design is likely to lead to changes to these areas and RSHP accept no legal responsibility for any use of these areas for any purpose other than supporting the planning application.

Do not scale from the drawing. The author of this drawing takes no responsibility for any dimensions obtained by measuring or scaling from this drawing and no reliance may be placed on such dimensions. If no dimension is given, it is the responsibility of the recipient to ascertain the dimension specifically from the author or by site measurement.

The sizing of all structural and service elements must always be checked against the relevant engineer's drawings. No reliance should be placed upon sizing information shown on this drawing.

Drawing Purpose: For Planning Application

Drawn by	Checked by	Authorised by
JN	JN	TM

Project: LSE-CBR London

Drawing Title: Detail Bay Staircase St Clements Core

© copyright Rogers Stirk Harbour + Partners. all rights reserved 2014

Contact
Rogers Stirk Harbour + Partners
On behalf of London School of Economics and Political Science
Thames Wharf Rainville Road London W6 9HA
tel: 020 7385 1235
fax: 020 7386 9409
email: JT01949@rsh-p.com
www.rsh-p.com

Scale @ A1	Drawing Number	
1:100	RSHP-A-80570-BC-D-X	
Drawing Date	Revision Date	Revision
05-12-2014	19-02-2015	P2